AD 2 AERODROMES

RJFS AD 2.1 AERODROME LOCATION INDICATOR AND NAME

RJFS - SAGA

RJFS AD 2.2 AERODROME GEOGRAPHICAL AND ADMINISTRATIVE DATA

1	ARP coordinates and site at AD	*330859N/1301808E* 286° /1.0km FM RWY29 THR
2	Direction and distance from (city)	14.2km(7.6NM) S FM Saga JR station
3	Elevation/ Reference temperature	6.0ft/ 31.8°C(2002-2006)
4	Geoid undulation at AD ELEV PSN	106.34ft
5	MAG VAR/ Annual change	7°W(2006) / 1.5'W
6	AD Administration, address, telephone, telefax, telex, AFS, e-mail and/or Web-site addresses	Saga Pref. 9476-187, Inuido, Kawasoe-machi, Saga-city, Saga Pref. Tel: 0952-46-0150, Fax: 0952-46-0153
7	Types of traffic permitted(IFR/VFR)	IFR/VFR
8	Remarks	Saga Airport Branch(CAB). 9476-187, Inuido, Kawasoe-machi, Saga-city, Saga Pref., Japan Tel: 0952-46-0002, Fax: 0952-46-0004

RJFS AD 2.3 OPERATIONAL HOURS

1	AD Administration	2130 - 1500
2	Customs and immigration	Customs: 2330-0815 Immigration: INTL SKED FLT hours only
3	Health and sanitation	INTL SKED FLT hours only
4	AIS Briefing Office	Nil
5	ATS Reporting Office(ARO)	Nil
6	MET Briefing Office	H24 (FUKUOKA)
7	ATS	2130 - 1500 Remarks:2130-2300 and 1030-1500, AFIS provided by Fukuoka Airport Office.
8	Fuelling	2130 - 1300
9	Handling	2130 - 1300
10	Security	2130 - 1300
11	De-icing	Nil
12	Remarks	Nil

RJFS AD 2.4 HANDLING SERVICES AND FACILITIES

1	Cargo-handling facilities	All the modern institutions that deal with the weight thing to Boeing767 type.
2	Fuel/ oil types	Fuel grades: Jet A1
3	Fuelling facilities/ capacity	Fuel truck / Not limited
4	De-icing facilities	Nil
5	Hangar space for visiting aircraft	Nil
6	Repair facilities for visiting aircraft	Nil
7	Remarks	Nil

RJFS AD 2.5 PASSENGER FACILITIES

1	Hotels	At Saga city
2	Restaurants	At Airport
3	Transportation	Buses and Taxi
4	Medical facilities	First aid, Hospital in Saga city 12km
5	Bank and Post Office	Bank : At Saga City Post Office : 6km North from Airport
6	Tourist Office	At Saga city
7	Remarks	Nil

RJFS AD 2.6 RESCUE AND FIRE FIGHTING SERVICES

1	AD category for fire fighting	CAT 8
2	Rescue equipment	Chemical fire fighting truck × 3 Emergency medical equipments conveyance truck × 1
3	Capability for removal of disabled aircraft	Ask AD administration
4	Remarks	Nil

RJFS AD 2.7 SEASONAL AVAILABILITY-CLEARING

1	Types of clearing equipment	Nil
2	Clearance priorities	Nil
3	Remarks	Nil

RJFS AD 2.8 APRONS, TAXIWAYS AND CHECK LOCATIONS DATA

1	Apron surface and strength	West Apron Surface: Concrete, Strength: PCR 1132/R/B/W/T East Apron Surface: Asphalt-Concrete, Strength: PCR 175/F/C/Y/T
2	Taxiway width, surface and strength Asphalt Concrete	TWY T1 Width: 30m, Surface: asphalt-concrete, Strength: PCR 889/F/B/X/T TWY T2 Width: 9m, Surface: asphalt-concrete, Strength: PCR 175/F/C/Y/T
3	ACL and elevation	Not Available
4	VOR checkpoints	Not Available
5	INS checkpoints	(Spot NR) 10 : *330910.32N 1301805.68E* 11 : *330910.79N 1301807.45E* 12 : *330910.55N 1301809.07E* 21 : *330910.25N 1301811.22E* 22 : *330909.87N 1301813.98E*
6	Remarks	Nil

RJFS AD 2.9 SURFACE MOVEMENT GUIDANCE AND CONTROL SYSTEM AND MARKINGS

1	Use of aircraft stand ID signs, TWY guide lines and Visual dock-ing/ parking guidance system of aircraft stands	ACFT stand ID signs: Spot 12, 21 TWY guide line: T1 Visual docking guidance system: Nil
2	RWY and TWY markings and LGT	RWY: RWY11/29 (Marking) RWY designation, RWY CL, RWY THR, RWY middle point, Aiming point, TDZ, RWY side stripe, RWY turn pad CL, RWY turn pad edge line (LGT) RCLL, REDL, RTHL, RTZL, WBAR, Turning point indicator LGT TWY: T1 (Marking) Intermediate HLDG PSN (LGT) TWY edge LGT, TWY CL LGT,Taxiing guidance sign TWY: T2 (LGT) TWY edge LGT,Taxiing guidance sign
3	Stop bars	Nil
4	Remarks	(Marking) Overrun area, Aircraft parking position, Aircraft stand taxi lane. (LGT) Apron flood LGT

180° TURN ON RWY

B767型機用の滑走路180°転回実施要項

1. 滑走路中心線からターニングパッド中心線標識に従って進行する。
2. 転回灯1が一直線に見えるように進行し、転回灯2が一直線に見えたとき転回を開始する。転回時はMAX STEERING ANGLEを使用する。

180°turn procedure on RWY for B767 aircraft

1. Proceed along the RWY Center Line to the starting point of the RWY Turn Pad Centerline Marking ; then
2. Proceed along RWY Turn Pad Center Line Marking to see the Turning Point Indicator Light 1 on a straight line, then commence turn at the spot where you (pilot)can see the Turning Point Indicator Lights 2 on a straight line at an angle of 9 o'clock. When turning, take MAX STEERING ANGLE.

SAGA AP

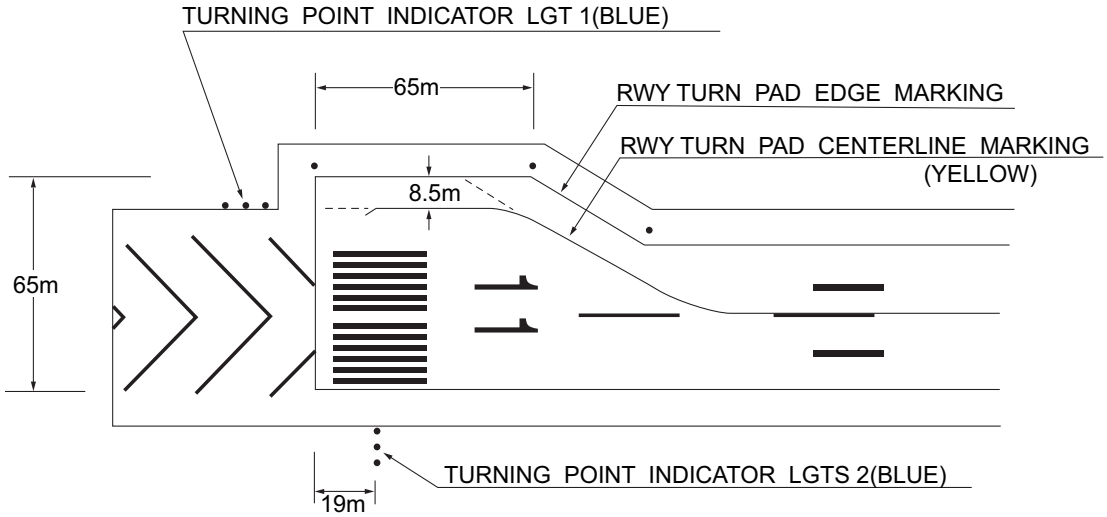

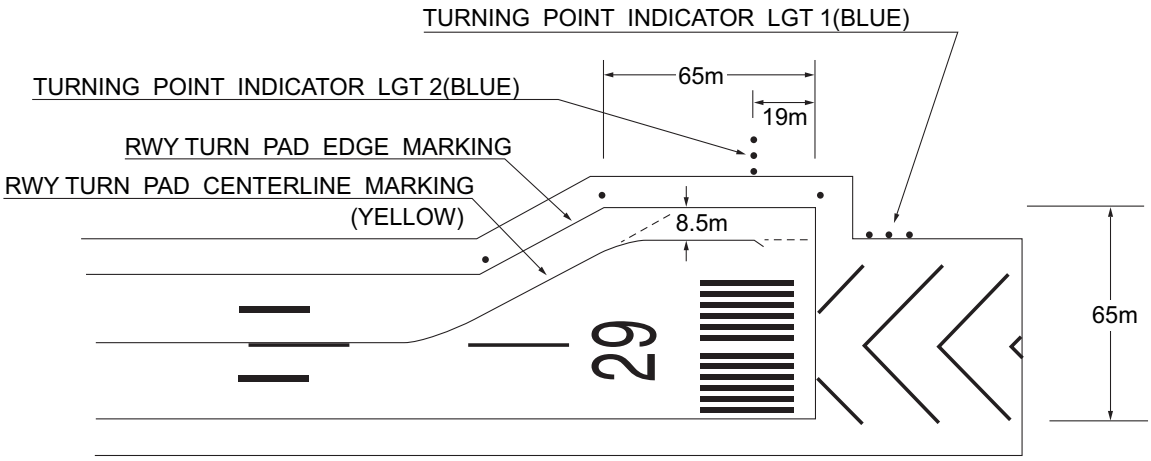

RJFS AD 2.10 AERODROME OBSTACLES

In Area2 Nil

Other obstacles

OBST ID/designation	Obstacle type	Coordinates	Elevation	Markings/LGT	Remarks
RJFS1	Levee	*330915.3N1301706.0E*	25ft	- / LIL	Under APCH surface
RJFS2	Levee	*330907.7N1301709.0E*	25ft	- / LIL	Under APCH surface
RJFS3	Levee	*330859.9N1301712.1E*	25ft	- / LIL	Under APCH surface

In Area3 To be developed

RJFS AD 2.11 METEOROLOGICAL INFORMATION PROVIDED

1	Associated MET Office	FUKUOKA
2	Hours of service MET Office outside hours	H24 (FUKUOKA)
3	Office responsible for TAF preparation Periods of validity	FUKUOKA 30 Hours
4	Type of landing forecast interval of issuance	Nil
5	Briefing/ consultation provided	Briefing is available upon inquiry at FUKUOKA
6	Flight documentation Language(s) used	C En
7	Charts and other information available for briefing or consultation	S_6, U_{85}, U_7, U_5, U_3, U_{25}, U_2/T_r, P_S, P_5, P_3, P_{25}, P_{SWE}, P_{SWF}, P_{SWG}, P_{SWI}, P_{SWM}, P_{SW}(domestic), E, C, W_E, W_F, W_G, W_I, W, N
8	Supplementary equipment available for providing information	Nil
9	ATS units provided with information	TWR, APP, ATIS, RADIO
10	Additional information(limitation of service, etc.)	Nil

RJFS AD 2.12 RUNWAY PHYSICAL CHARACTERISTICS

Designations RWY NR	TRUE BRG	Dimensions of RWY(M)	Strength(PCR) and surface of RWY	THR coordinates THR geoid undulation	THR elevation and highest elevation of TDZ of precision APP RWY
1	2	3	4	5	6
11	099.25°	2000×45	PCR 1042/F/C/X/T Asphalt-Concrete	*330904.20N* *1301729.91E*	THR ELEV: 6ft
29	279.25°	2000×45	PCR 1042/F/C/X/T Asphalt-Concrete	*330853.77N* *1301846.08E*	THR ELEV: 6ft

Slope of RWY and SWY	Strip Dimensions(M)	RESA(Overrun) Dimensions(M)	Remarks
7	10	11	14
See below figure	2120 x 300	40x(MNM:247 MAX:300)*	RWY grooving: 2000m x 30m Turning pad installed
See below figure	2120 x 300	193x(MNM:96 MAX:300)* *For detail, ask airport administrator	RWY grooving: 2000m x 30m Turning pad installed

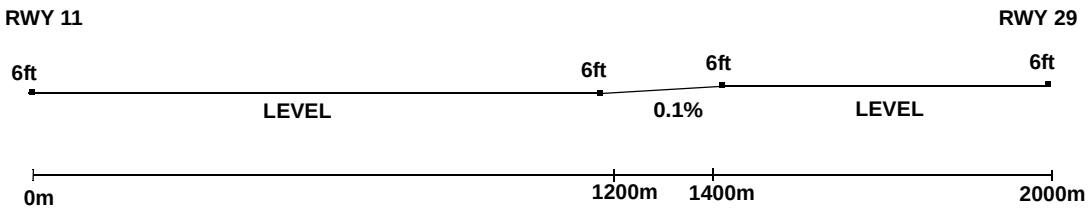

RJFS AD 2.13 DECLARED DISTANCES

RWY Designator	TORA (m)	TODA (m)	ASDA (m)	LDA (m)	Remarks
1	2	3	4	5	6
11	2000	2000	2000	2000	Nil
29	2000	2000	2000	2000	Nil

RJFS AD 2.14 APPROACH AND RUNWAY LIGHTING

RWY Designator	APCH LGT type LEN INTST	RTHL Color WBAR	PAPI (VASIS) Angle DIST FM THR MEHT	RTZL LEN	RCLL LEN Spacing Color INTST	REDL LEN Spacing Color INTST	RENL Color WBAR	STWL LEN Color
1	2	3	4	5	6	7	8	9
11	SALS (*1) 420m LIH	Green -	PAPI 3.0°/LEFT 366.2M 61ft	-	2,000m 30m Coded color (White/Red)	2,000m 60m Coded color (White/Yellow)	Red	Nil (*2)
29	PALS (CATI) 900m LIH	Green Green	PAPI 3.0°/LEFT 374.6M 61ft	900m	2,000m 30m Coded color (White/Red)	2,000m 60m Coded color (White/Yellow)	Red	Nil (*2)
Remarks								
10								
SALS with APCH LGT beacon(600m and 900m FM RWY 11 THR)(*1) Overrun area edge LGT(LEN:60m Color:Red)(*2) CGL for RWY 11 and RWY 29								

RJFS AD 2.15 OTHER LIGHTING, SECONDARY POWER SUPPLY

1	ABN/IBN location, characteristics and hours of operation	ABN: *330919N/1301752E*, White/Green EV4.3sec, HO
2	LDI location and LGT Anemometer location and LGT	Nil RWY 11, RWY29/LGTD
3	TWY edge and center line lighting	TWY edge and center line lights installed, see AD2.9
4	Secondary power supply/ switch-over time	Within 1 sec : REDL, RTHL, WBAR, RCLL, Overrun area edge LGT, Turning point indicator LGT Within 15 sec : Other LGT
5	Remarks	WDI LGT

RJFS AD 2.16 HELICOPTER LANDING AREA

Nil

RJFS AD 2.17 ATS AIRSPACE

Designation and lateral limits		Vertical limits (ft)	Airspace classification	ATS unit call sign Language	Remarks
1		2	3	4	6
SAGA CTR	Area within a radius of 5nm of SAGA ARP (*3309N/13018E*).	——— 3000	D	SAGA TWR SAGA RADIO(1) En	(1)2130-2300 1030-1500
FUKUOKA ACA	See RJFF attached chart		E	FUKUOKA APP FUKUOKA DEP FUKUOKA RADAR En	

RJFS AD 2.18 ATS COMMUNICATION FACILITIES

Service designation	Call sign	Frequency	Hours of operation	Remarks
1	2	3	4	5
APP	Fukuoka Radar	119.7MHz 279.2MHz 121.5MHz(E) 243.0MHz(E)	2145 - 1315	2130 - 2145 and 1315 - 1500: APP service provided by Kobe ACC
TWR	Saga Tower	118.025MHz(1) 126.2MHz 232.2MHz 121.5MHz(E) 243.0MHz(E)	2300 - 1030(*)	(1)Primary
ATIS	Saga Airport	126.825MHz	2300 - 1030	
AFIS	Saga Radio	118.025MHz	2130 - 2300 1030 - 1500(*)	Operated by Fukuoka Airport Office.

*Depending on air traffic situation, ATC service will be provided from 2245 to 2300 and from 1030 to 1045.

RJFS AD 2.19 RADIO NAVIGATION AND LANDING AIDS

Type of aid (VOR declination)	ID	Frequency	Hours of operation	Site of transmitting antenna coordinates	Elevation DME transmitting antenna	Remarks
1	2	3	4	5	6	7
VOR (7°W/2013)	SGE	114.75MHz	H24	*330855.03N 1301734.43E*		
DME	SGE	1055MHz (CH-94Y)	H24	*330855.03N 1301734.43E*	40ft	
ILS-LOC 29 (CAT-I)	ISG	110.15MHz	2130 - 1500	*330905.42N 1301721.02E*		BRG(MAG)286° 233m(764ft) away FM RWY11 THR
ILS-GP 29		334.25MHz	2130 - 1500	*330851.56N 1301833.39E*		GP angle 3.0° HGT of ILS Ref datum 16.5m(54ft). 315m(1034ft) inside FM RWY29 THR 120m(394ft) S of RCL
ILS-DME 29	ISG	1125MHz	2130 - 1500	*330851.33N 1301832.99E*	22ft	323m(1060ft) inside FM RWY29 THR 129m(423ft) S of RCL
MSAS		1575.42MHz	H24			Transmitting antennas are satellite based.

ILS

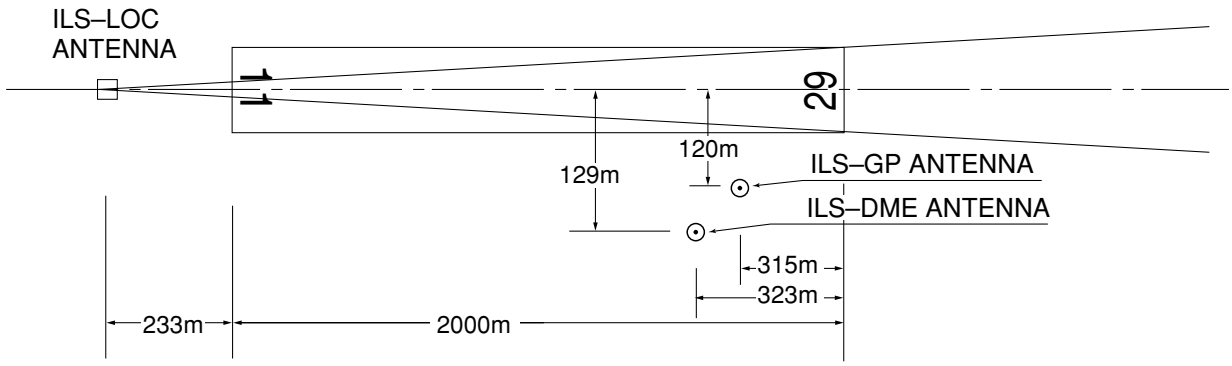

REMARKS : 1. LOC beam BRG(MAG) 286˚
2. HGT of ILS REF datum 16.5m(54ft)
3. GP Angle 3.0˚
4. ELEV of ILS-DME 6.6m(22ft)

RJFS AD 2.20 LOCAL TRAFFIC REGULATIONS

1. Airport regulations

1.1 Prior notification should be required with AD Administration for the purpose of getting the permission when crossing Saga CTR from 2130UTC to 2300UTC or from 1030UTC to 1500UTC.
For further information (0000UTC - 0800UTC MON-FRI EXC HOL)
Air Traffic Controller Office, Saga Airport Branch
TEL: 0952-46-0001

1.1 6 時 30 分から 8 時 00 分または 19 時 30 分から 24 時 00 分までの間、佐賀管制圏を通過する場合は、当該通過の許可を得るためにあらかじめ佐賀空港出張所へ調整すること。
問い合わせ先
佐賀空港出張所管制官事務室
（月曜日から金曜日までのうち、9 時 00 分から 17 時 00 分までの間。ただし休日を除く。）
TEL：0952-46-0001

1.2 On use of Saga airport, aircraft operator is required to notify Saga Pref In advance.
TEL: 0952-46-0150

1.2 佐賀空港の使用について、航空機の運航者はあらかじめ佐賀県に届け出ること。
TEL：0952-46-0150

2. Taxiing to and from stands

Nil

3. Parking area for small aircraft(General aviation)

Nil

4. Parking area for helicopters

Nil

5. Apron - taxiing during winter conditions

Nil

6. Taxiing - limitations

コード C 以上（翼端が 30m 以上）の航空機は原則としてターニングパッドを使用すること。	Aircraft with Wing span 30m or longer should use turning pads in principle.

7. School and training flights - technical test flights - use of runways

Nil

8. Helicopter traffic - limitation

Nil

9. Removal of disabled aircraft from runways

Nil

RJFS AD 2.21 NOISE ABATEMENT PROCEDURES

計器進入方式および標準計器出発方式の使用
(SEE AD1.1.6.5)

すべての航空機を対象に、午後 10 時以降、午前 0 時までの間においては、空港周辺における航空機騒音軽減のため、緊急またはやむを得ない状況にある場合を除き、以下の計器進入方式及び標準計器出発方式によるものとする。

(1) 到着 : VOR RWY11, RNP RWY11 (AR), RNP RWY29 (AR), VOR A, VOR C

(2) 出発:ARIAKE REVERSAL DEPARTURE, SOIGI DEPARTURE

注) 以下の方式は当該時間帯に限り使用される方式である。

(1) 到着 : VOR RWY11
(2)出発: ARIAKE REVERSAL DEPARTURE, SOIGI DEPARTURE

Use of Instrument Approach Procedure(IAP) & Standard Instrument Departure(SID) (SEE AD1.1.6.5)

For all aircraft, between 2200JST(1300UTC) and 0000JST(1500UTC), in order to reduce aircraft noise in the vicinity of airport, except in emergency or unavoidable situation, pilots are requested to fly via the following SID and IAP.
(1) For arrivals : VOR RWY11, RNP RWY11 (AR), RNP RWY29 (AR), VOR A, VOR C

(2) For departures : ARIAKE REVERSAL DEPARTURE, SOIGI DEPARTURE

Note) Following procedures should be used only between 2200JST(1300UTC) and 0000JST(1500UTC)
(1) For arrivals : VOR RWY11
(2) For departures : ARIAKE REVERSAL DEPARTURE, SOIGI DEPARTURE

RJFS AD 2.22 FLIGHT PROCEDURES

1. TAKE OFF MINIMA

	RWY	ACFT CAT	REDL & RCLL		REDL or RCLL or RCL Marking		NIL (DAYTIME ONLY)	
			RVR	VIS	RVR	VIS	RVR	VIS
Multi-Engine ACFT with TKOF ALTN AP FILED	11	A,B,C,D	-	400m	-	400m	-	500m
	29	A,B,C,D	400m	400m	400m	400m	-	500m
OTHER	11	A,B,C,D	AVBL LDG MINIMA					
	29	A,B,C,D						

2. Lost Communication Procedures for Arrival Aircraft under radar navigational guidance
If radio communications with Fukuoka Approach / Radar are lost for 30 seconds, squawk Mode A/3 Code 7600 and:
(I) 1. Contact Saga Tower / Radio.
2. If unable, proceed in accordance with visual flight rules.
3. If unable, proceed to SAGA VOR/DME at last assigned altitude or 5,000ft whichever is higher, and execute instrument approach.
(II) Procedures other than above will be issued when situation required.

RJFS AD 2.23 ADDITIONAL INFORMATION

1. 空港を使用する場合は、あらかじめ佐賀空港事務所へ調整すること。

1. Prior notification should be required with AD Admsnistration when using the Airport.

RJFS AD 2.24 CHARTS RELATED TO AN AERODROME

Aerodrome/Heliport Chart
Standard Departure Chart - Instrument (SAGA, ARIAKE)
Standard Departure Chart - Instrument (KIKYU)
Standard Departure Chart - Instrument (BALLOON - RNAV)
Standard Departure Chart - Instrument (SOIGI - RNAV)
Standard Arrival Chart - Instrument (IRPIN NORTH, IRPIN SOUTH)
Instrument Approach Chart (ILS or LOC RWY29)
Instrument Approach Chart (VOR RWY29)
Instrument Approach Chart (VOR RWY11)
Instrument Approach Chart (RNP RWY29 (AR))
Instrument Approach Chart (RNP RWY11 (AR))
Instrument Approach Chart (VOR A)
Instrument Approach Chart (VOR B)
Instrument Approach Chart (VOR C)
Other Chart (Visual REP)
Other Chart (BALLOON)
Other Chart (MVA CHART)

RJFS / SAGA

AD CHART

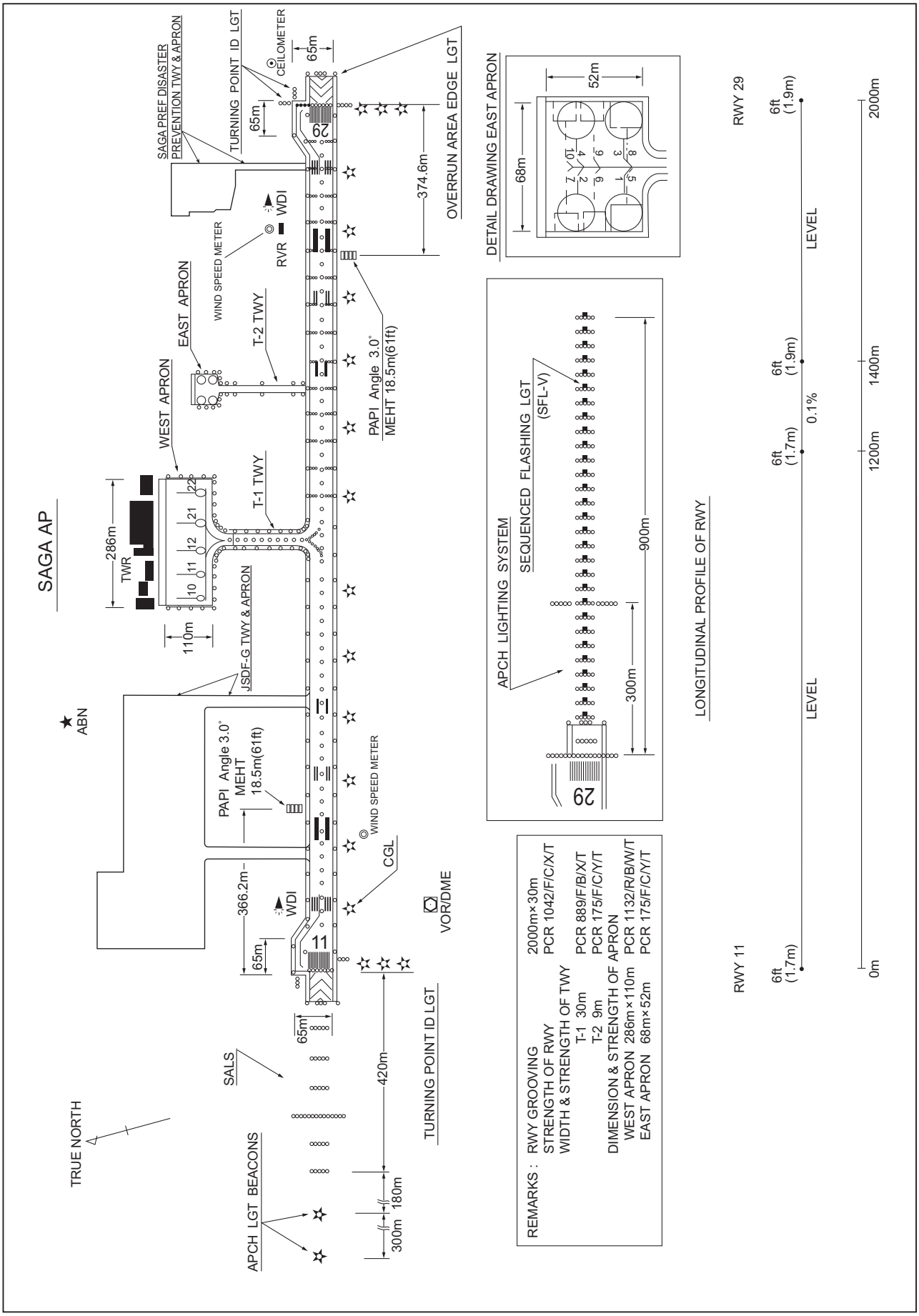

CHANGE : ABN relocated.

INTENTIONALLY LEFT BLANK

STANDARD DEPARTURE CHART - INSTRUMENT

RJFS / SAGA SID

SAGA REVERSAL TWO DEPARTURE

RWY11 : Climb RWY HDG to 500FT, turn right,...
RWY29 : Climb RWY HDG to 500FT,turn left HDG 090˚ to intercept and proceed...
...via SGE R135 to 9.0DME, turn left, direct to SGE VOR/DME.
Cross SGE VOR/DME at 6000FT.

Note RWY29 : 3.5% climb gradient required up to 500FT.

ARIAKE REVERSAL TWO DEPARTURE

RWY11 : Climb RWY HDG to 500FT, turn right HDG 288˚...
RWY29 : Climb RWY HDG to 500FT, turn left HDG 198˚...
...to intercept and proceed via SGE R243 to 7.0DME, turn right, direct to SGE VOR/DME.
Cross SGE VOR/DME at or above 6000FT.

Note RWY29 : 3.5% climb gradient required up to 500FT.

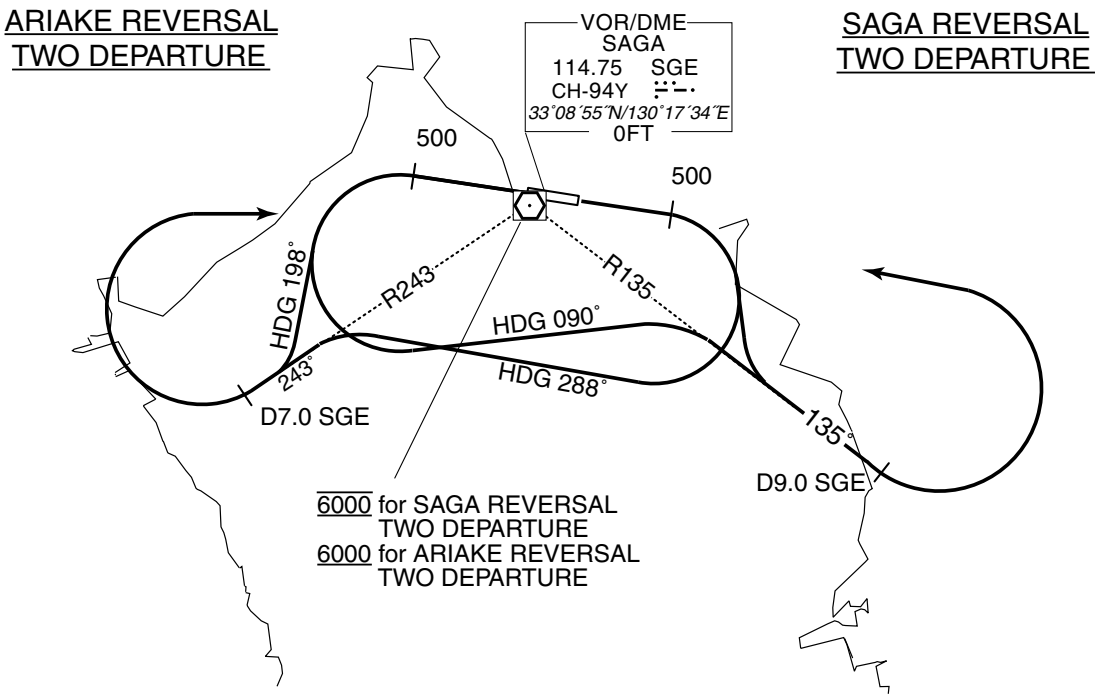

STANDARD DEPARTURE CHART - INSTRUMENT

RJFS / SAGA TRANSITION

KUMAMOTO TRANSITION

From over SGE VOR/DME, via SGE R195 to 18.0DME, turn left, via KUE R271 to KUE VOR/DME.

Cross SGE R195/6.0DME at 6000FT, cross SGE R195/18.0DME at or above 10000FT.

NAGASAKI TRANSITION

From over SGE VOR/DME, via SGE R195 to 18.0DME, turn right, direct to OLE VOR/DME.

Cross SGE R195/6.0DME at 6000FT, cross SGE R195/18.0DME at or above 10000FT.

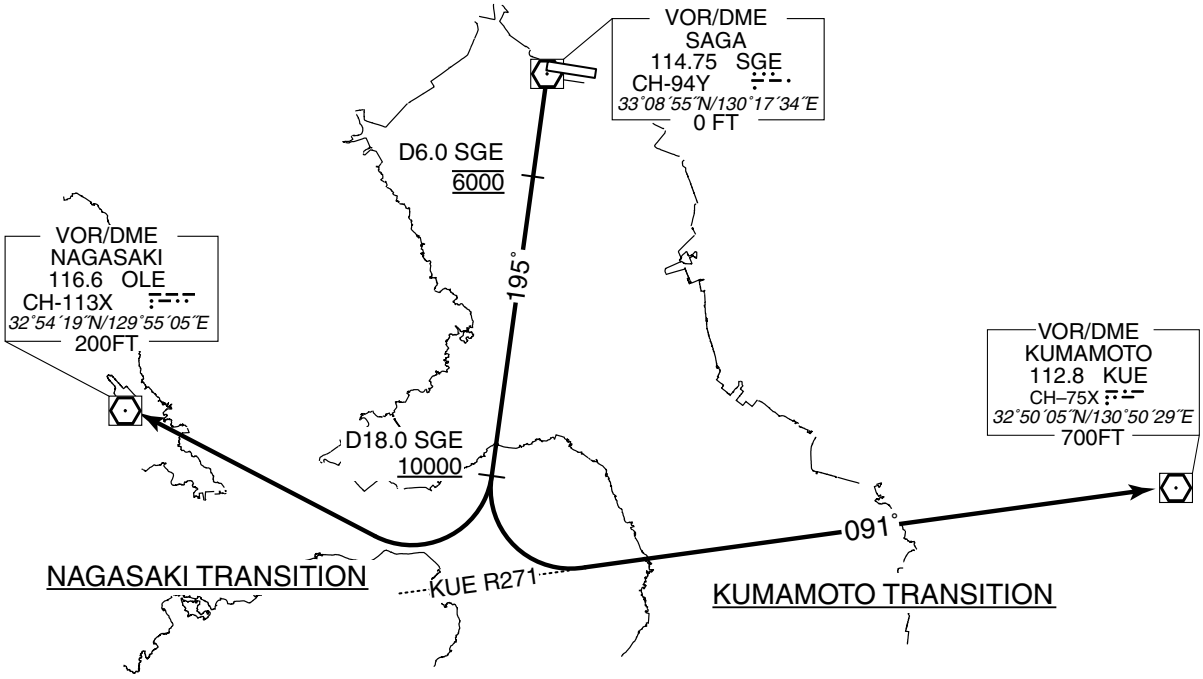

STANDARD DEPARTURE CHART - INSTRUMENT

RJFS / SAGA SID

KIKYU FIVE DEPARTURE

RWY11 : Climb RWY HDG to 500FT, turn right,...
RWY29 : Climb RWY HDG to 500FT, turn left HDG075˚ to intercept and proceed...
... via SGE R120 to 9.0DME, turn left HDG048˚ to intercept
and proceed via SGE R093 to KIKYU.
Cross KIKYU at or above 13000FT.

Note RWY29 : 3.5% climb gradient required up to 500FT.

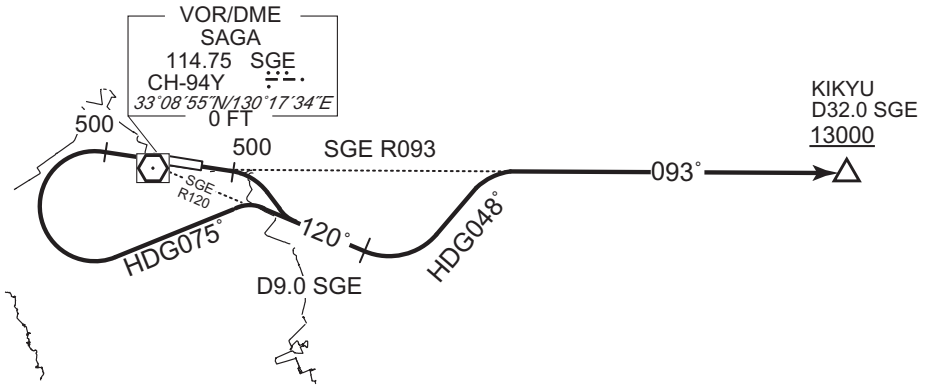

CHANGE : Description of PROC name.

STANDARD DEPARTURE CHART - INSTRUMENT

RJFS / SAGA TRANSITION

MUSASHI TRANSITION

From over KIKYU, via TFE R253 to TFE VOR/DME.

Cross TFE R253/38.0DME at or above FL140, cross TFE R253/31.0DME at or above FL170.

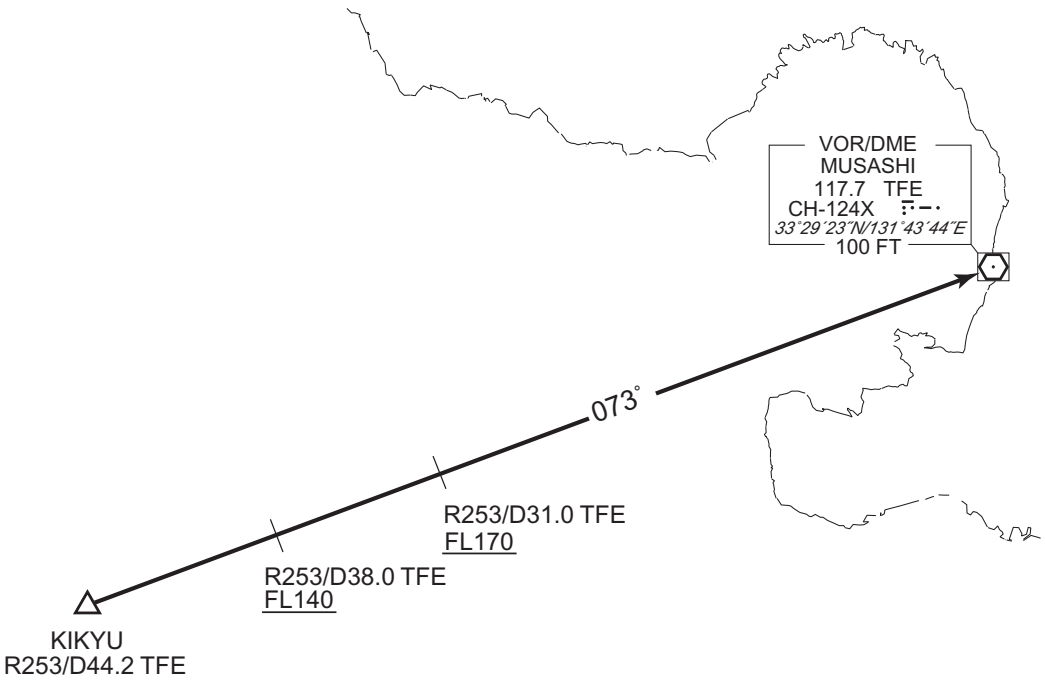

CHANGE : Description of PROC name.

STANDARD DEPARTURE CHART - INSTRUMENT

RJFS / SAGA

RNAV TRANSITION

OOITA TRANSITION		RNAV1
NOTE 1) DME/DME/IRU or GNSS required. 2) RADAR service required.	Critical DME	–
	DME GAP	–
	Inappropriate Navaids	See AD1.1.6.10.3. Inappropriate NAVAIDs for RNAV1

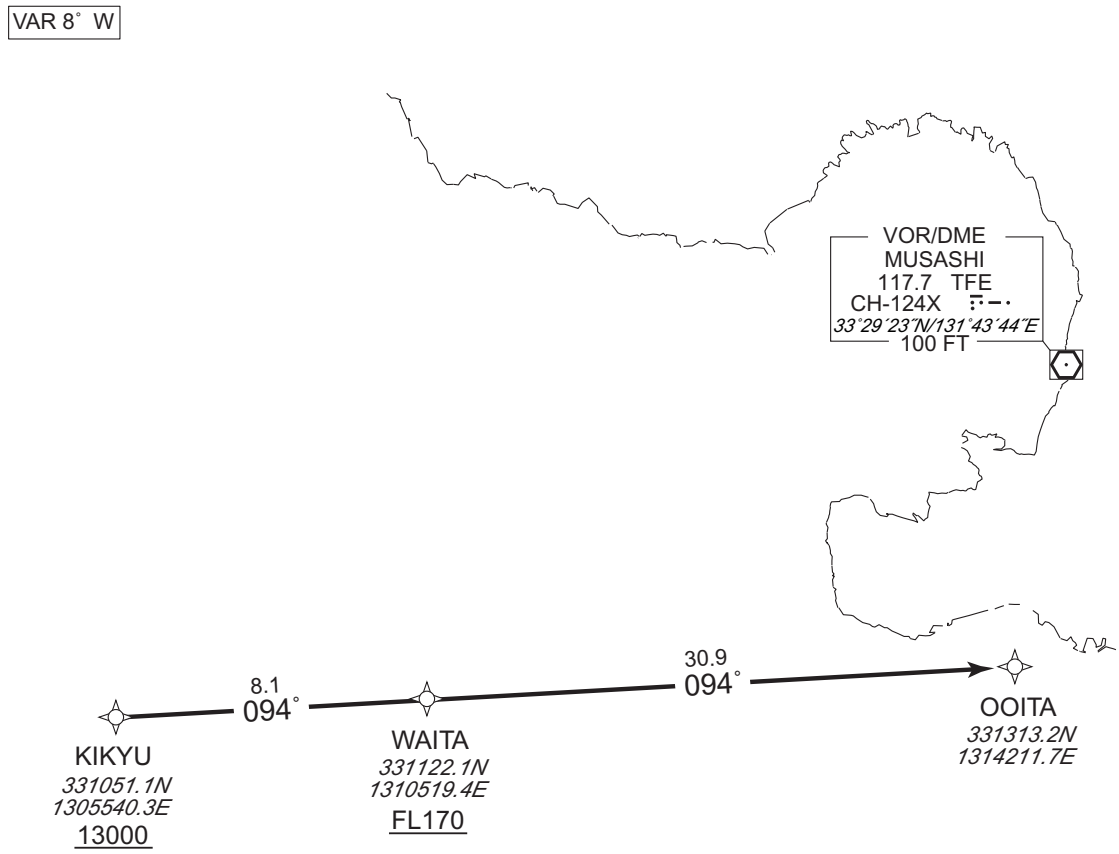

From KIKYU at or above 13000FT, to WAITA at or above FL170, to OOITA.

Serial Number	Path Descriptor	Waypoint Identifier	Fly Over	Course ˚M(˚T)	Magnetic Variation	Distance (NM)	Turn Direction	Altitude (FT)	Speed (KIAS)	Vertical Angle	Navigation Specification
001	IF	KIKYU	–	–	-7.9	–	–	+13000	–	–	RNAV1
002	TF	WAITA	–	094 (086.3)	-7.9	8.1	–	+FL170	–	–	RNAV1
003	TF	OOITA	–	094 (086.4)	-7.9	30.9	–	–	–	–	RNAV1

CHANGE : VAR.

INTENTIONALLY LEFT BLANK

STANDARD DEPARTURE CHART - INSTRUMENT

RJFS / SAGA

RNAV SID

BALLOON TWO DEPARTURE	RNP1
Note GNSS required.	

VAR 8˚ W

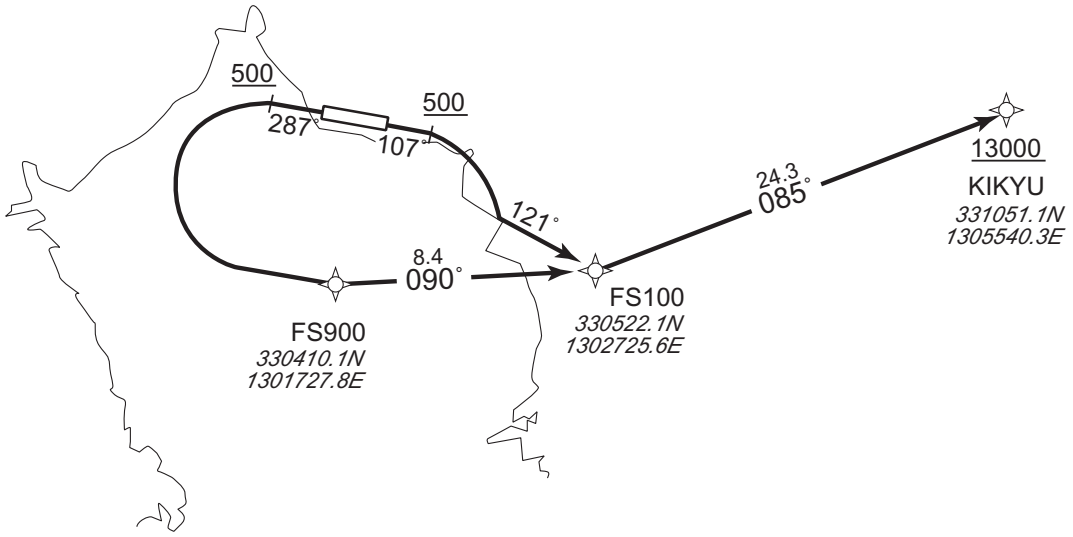

RWY11 : Climb on HDG107˚ at or above 500FT, turn right to FS100 on course 121˚, to KIKYU at or above 13000FT.

RWY29 : Climb on HDG287˚ at or above 500FT, turn left direct to FS900, to FS100, to KIKYU at or above 13000FT.

NOTE RWY29 : 3.5% climb gradient required up to 500FT.

CHANGE : PROC course. PROC renamed. VAR.

STANDARD DEPARTURE CHART - INSTRUMENT

RJFS / SAGA RNAV SID

BALLOON TWO DEPARTURE

RWY11

Serial Number	Path Descriptor	Waypoint Identifier	Fly Over	Course °M(°T)	Magnetic Variation	Distance (NM)	Turn Direction	Altitude (FT)	Speed (KIAS)	Vertical Angle	Navigation Specification
001	VA	-	-	107 (099.3)	-7.9	-	-	+500	-	-	RNP1
002	CF	FS100	-	121 (113.2)	-7.9	-	-	-	-	-	RNP1
003	TF	KIKYU	-	085 (076.8)	-7.9	24.3	-	+13000	-	-	RNP1

RWY29

Serial Number	Path Descriptor	Waypoint Identifier	Fly Over	Course °M(°T)	Magnetic Variation	Distance (NM)	Turn Direction	Altitude (FT)	Speed (KIAS)	Vertical Angle	Navigation Specification
001	VA	-	-	287 (279.3)	-7.9	-	-	+500	-	-	RNP1
002	DF	FS900	-	-	-7.9	-	L	-	-	-	RNP1
003	TF	FS100	-	090 (081.8)	-7.9	8.4	-	-	-	-	RNP1
004	TF	KIKYU	-	085 (076.8)	-7.9	24.3	-	+13000	-	-	RNP1

CHANGE : PROC course. PROC renamed. VAR.

STANDARD DEPARTURE CHART - INSTRUMENT

RJFS / SAGA — RNAV SID

SOIGI TWO DEPARTURE	RNP1
Note GNSS required.	

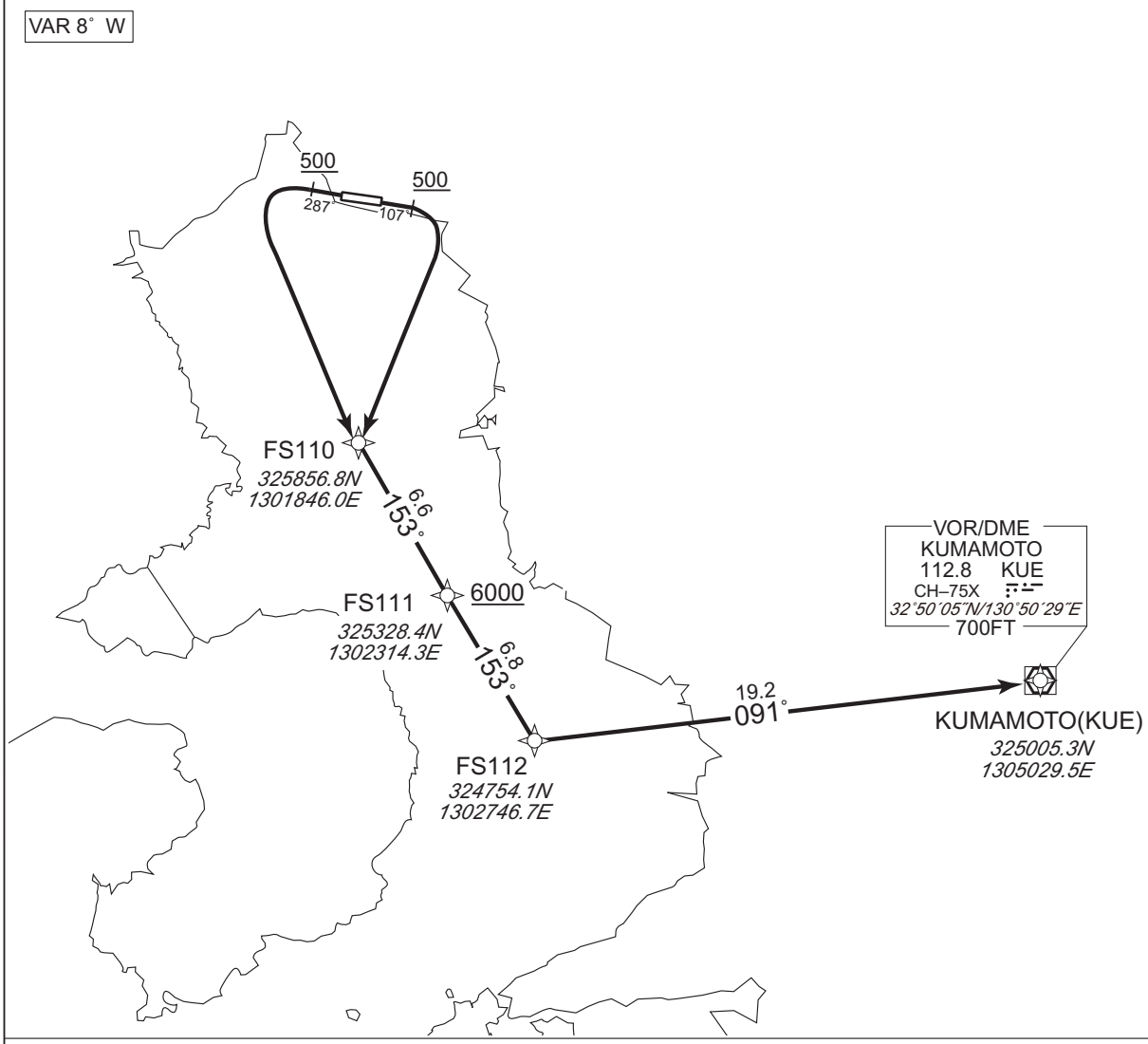

RWY11 : Climb on HDG107° at or above 500FT, turn right direct to FS110, to FS111 at or above 6000FT, to FS112, to KUE.

RWY29 : Climb on HDG287° at or above 500FT, turn left direct to FS110, to FS111 at or above 6000FT, to FS112, to KUE.

NOTE RWY29 : 3.5% climb gradient required up to 500FT.

CHANGE : PROC course. PROC renamed. VAR.

STANDARD DEPARTURE CHART - INSTRUMENT

RJFS / SAGA RNAV SID

SOIGI TWO DEPARTURE

RWY11

Serial Number	Path Descriptor	Waypoint Identifier	Fly Over	Course °M(°T)	Magnetic Variation	Distance (NM)	Turn Direction	Altitude (FT)	Speed (KIAS)	Vertical Angle	Navigation Specification
001	VA	-	-	107 (099.3)	-7.9	-	-	+500	-	-	RNP1
002	DF	FS110	-	-	-7.9	-	R	-	-	-	RNP1
003	TF	FS111	-	153 (145.5)	-7.9	6.6	-	+6000	-	-	RNP1
004	TF	FS112	-	153 (145.6)	-7.9	6.8	-	-	-	-	RNP1
005	TF	KUE	-	091 (083.4)	-7.9	19.2	-	-	-	-	RNP1

RWY29

Serial Number	Path Descriptor	Waypoint Identifier	Fly Over	Course °M(°T)	Magnetic Variation	Distance (NM)	Turn Direction	Altitude (FT)	Speed (KIAS)	Vertical Angle	Navigation Specification
001	VA	-	-	287 (279.3)	-7.9	-	-	+500	-	-	RNP1
002	DF	FS110	-	-	-7.9	-	L	-	-	-	RNP1
003	TF	FS111	-	153 (145.5)	-7.9	6.6	-	+6000	-	-	RNP1
004	TF	FS112	-	153 (145.6)	-7.9	6.8	-	-	-	-	RNP1
005	TF	KUE	-	091 (083.4)	-7.9	19.2	-	-	-	-	RNP1

CHANGE : PROC course. PROC renamed. VAR.

STANDARD ARRIVAL CHART-INSTRUMENT

RJFS / SAGA STAR

IRPIN NORTH ARRIVAL

From over IRPIN, via OLE R102 to MILEP, via SGE R194 to SGE VOR/DME via UGAMU.
Cross MILEP at 6000FT, cross SGE VOR/DME at or above 5000FT.

IRPIN SOUTH ARRIVAL

From over IRPIN, via OLE R102 to MILEP.
Cross MILEP at 6000FT.

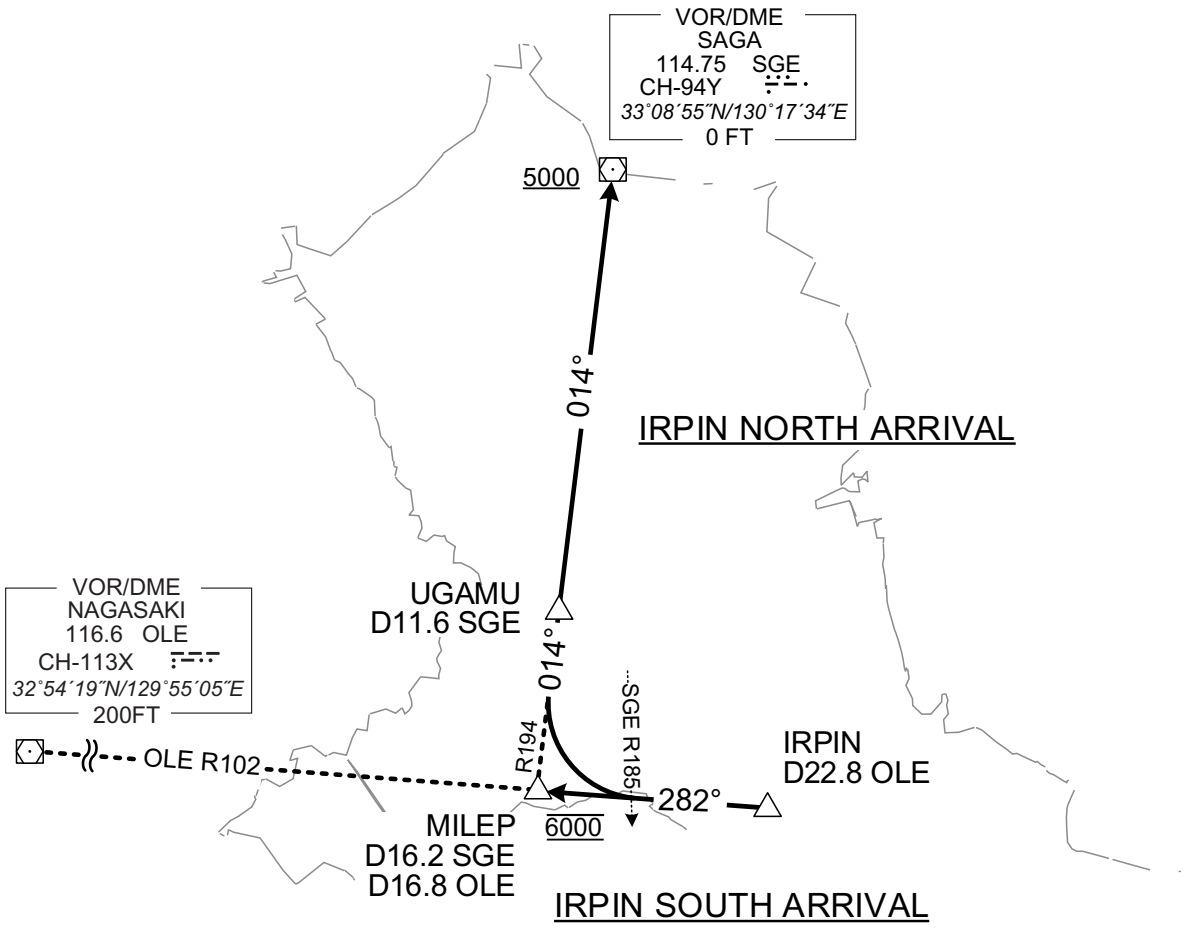

CHANGE: New PROC

INTENTIONALLY LEFT BLANK

INSTRUMENT APPROACH CHART

RJFS / SAGA — ILS or LOC RWY29

FUKUOKA RADAR	ILS - LOC	SAGA TOWER		RADAR AVBL
119.7 – 279.2	110.15 ISG ILS-GP 334.25 ILS-DME CH-38Y	118.025 – 232.2	2130–2300(UTC) 1030–1500(UTC) SAGA RADIO 118.025 AFIS provided by Fukuoka Airport Office	ATIS 126.825

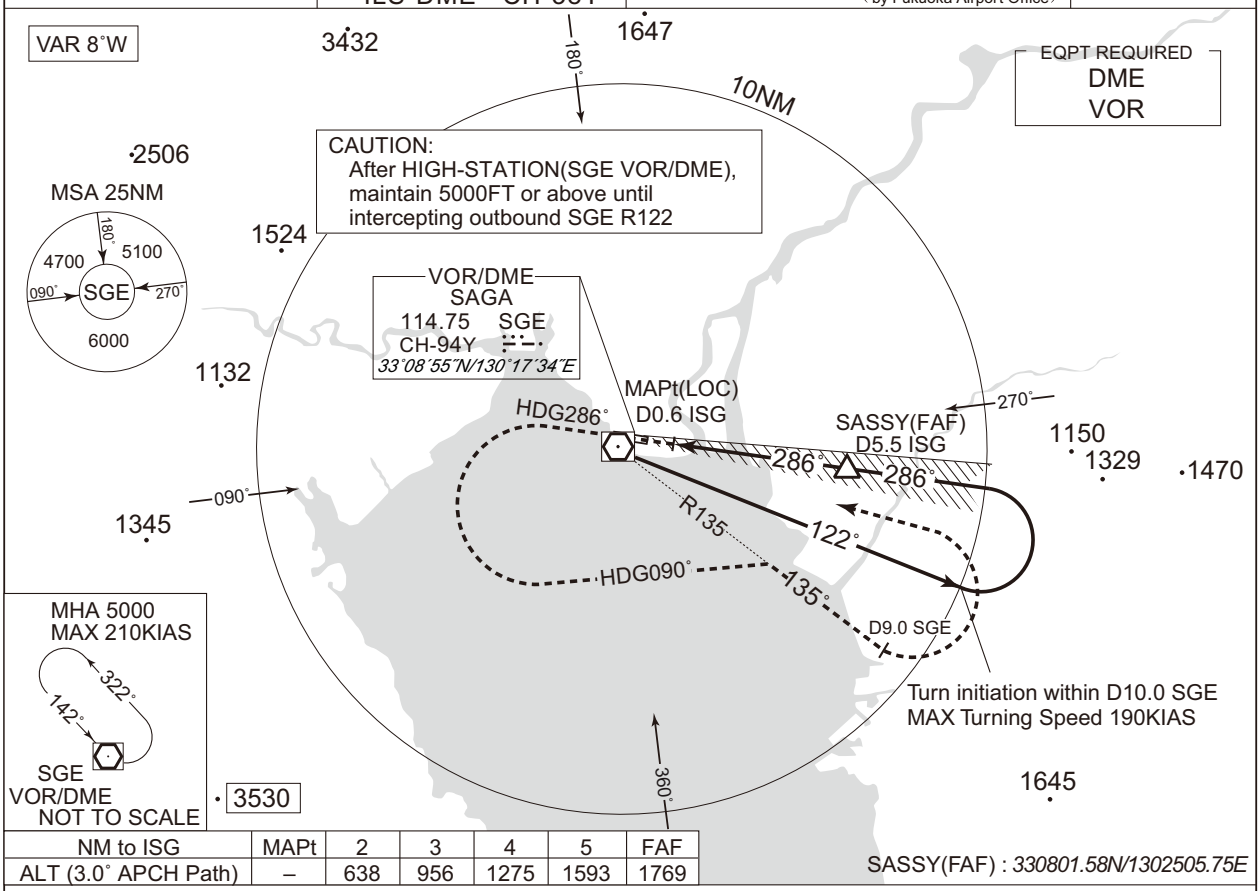

NM to ISG	MAPt	2	3	4	5	FAF
ALT (3.0˚ APCH Path)	–	638	956	1275	1593	1769

SASSY(FAF) : *330801.58N/1302505.75E*

MISSED APPROACH

Climb to 500FT on HDG286˚,
turn left HDG090˚ to intercept and
proceed via SGE R135 to 9.0DME,
turn left, direct to SGE VOR/DME
and hold at 5000FT.
Contact FUKUOKA RADAR.

Timing not authorized for defining the MAPt.

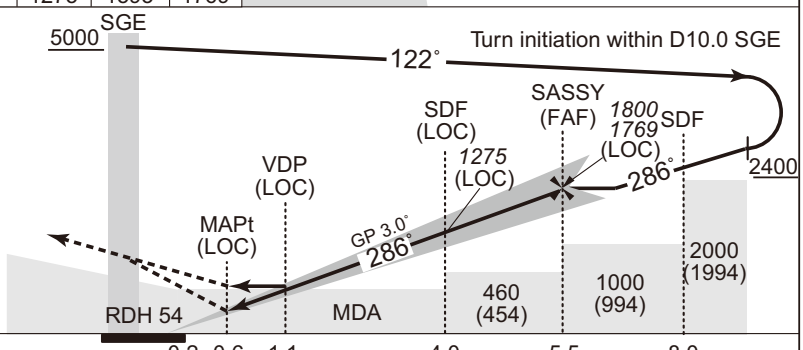

DME to ISG	0.2	0.6	1.1	4.0	5.5	8.0
NM to THR	0	0.5	0.9	3.8	5.4	7.8

Missed APCH climb gradient MNM 5.0%

MINIMA THR elev. 6 AD elev. 6

CAT	CAT I		LOC		CIRCLING	
	DA(H)	RVR/CMV	MDA(H)	RVR/CMV	MDA(H)	VIS
A	206 (200)	550	330 (324)	900	360 (354)	1600
B				1000	460 (454)	
C						2400
D				1400	560 (554)	3200

MINIMA with Missed APCH climb gradient of 2.5% are not established.
Circling to SOUTH side of RWY only.

CHANGE : ATC(TOWER, RADAR, ATIS AVBL).

INSTRUMENT APPROACH CHART

RJFS / SAGA — VOR RWY29

FUKUOKA RADAR	SAGA VOR/DME	SAGA TOWER		RADAR AVBL
119.7 – 279.2	114.75 SGE CH-94Y 33°08′55″N/130°17′34″E	118.025 – 232.2	2130–2300(UTC) 1030–1500(UTC) SAGA RADIO 118.025 AFIS provided by Fukuoka Airport Office	ATIS 126.825

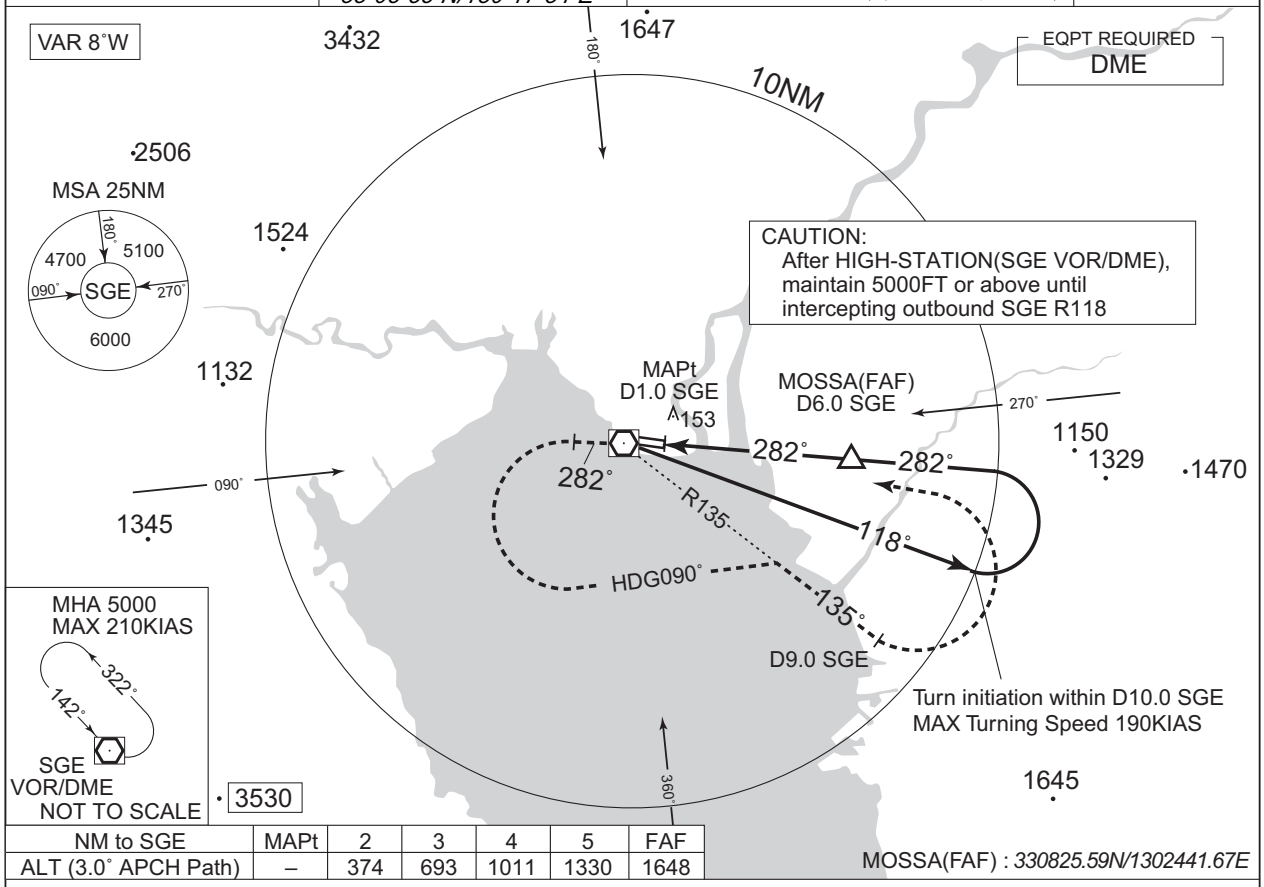

NM to SGE	MAPt	2	3	4	5	FAF
ALT (3.0° APCH Path)	–	374	693	1011	1330	1648

MOSSA(FAF) : *330825.59N/1302441.67E*

MISSED APPROACH

Climb to 500FT via SGE R282, turn left HDG090° to intercept and proceed via SGE R135 to 9.0DME, turn left, direct to SGE VOR/DME and hold at 5000FT.
Contact FUKUOKA RADAR.

Timing not authorized for defining the MAPt.

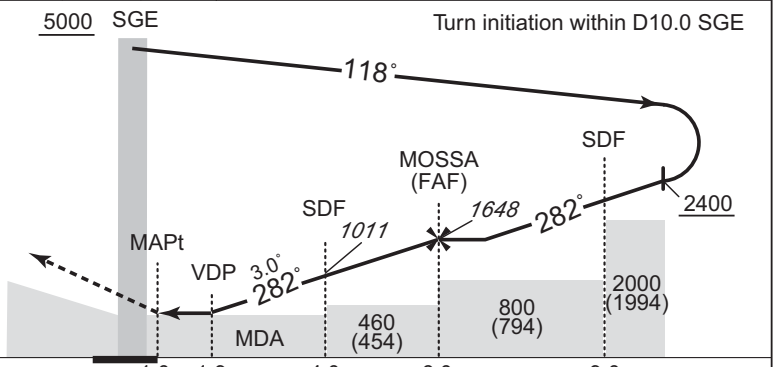

DME to SGE	1.0	1.9	4.0	6.0	9.0
NM to THR	0	0.9	3.0	5.0	8.0

MINIMA THR elev. 6 AD elev. 6

CAT			CIRCLING	
	MDA(H)	RVR/CMV	MDA(H)	VIS
A	330 (324)	900	360 (354)	1600
B		1000	460 (454)	
C				2400
D		1400	560 (554)	3200

Circling to SOUTH side of RWY only.

CHANGE : ATC(TOWER, RADAR, ATIS AVBL).

INSTRUMENT APPROACH CHART

RJFS / SAGA — VOR RWY11

FUKUOKA RADAR	SAGA VOR/DME	SAGA TOWER		RADAR AVBL
119.7 – 279.2	114.75 SGE CH-94Y 33°08′55″N/130°17′34″E	118.025 – 232.2	2130–2300(UTC) 1030–1500(UTC) SAGA RADIO 118.025 AFIS provided by Fukuoka Airport Office	ATIS 126.825

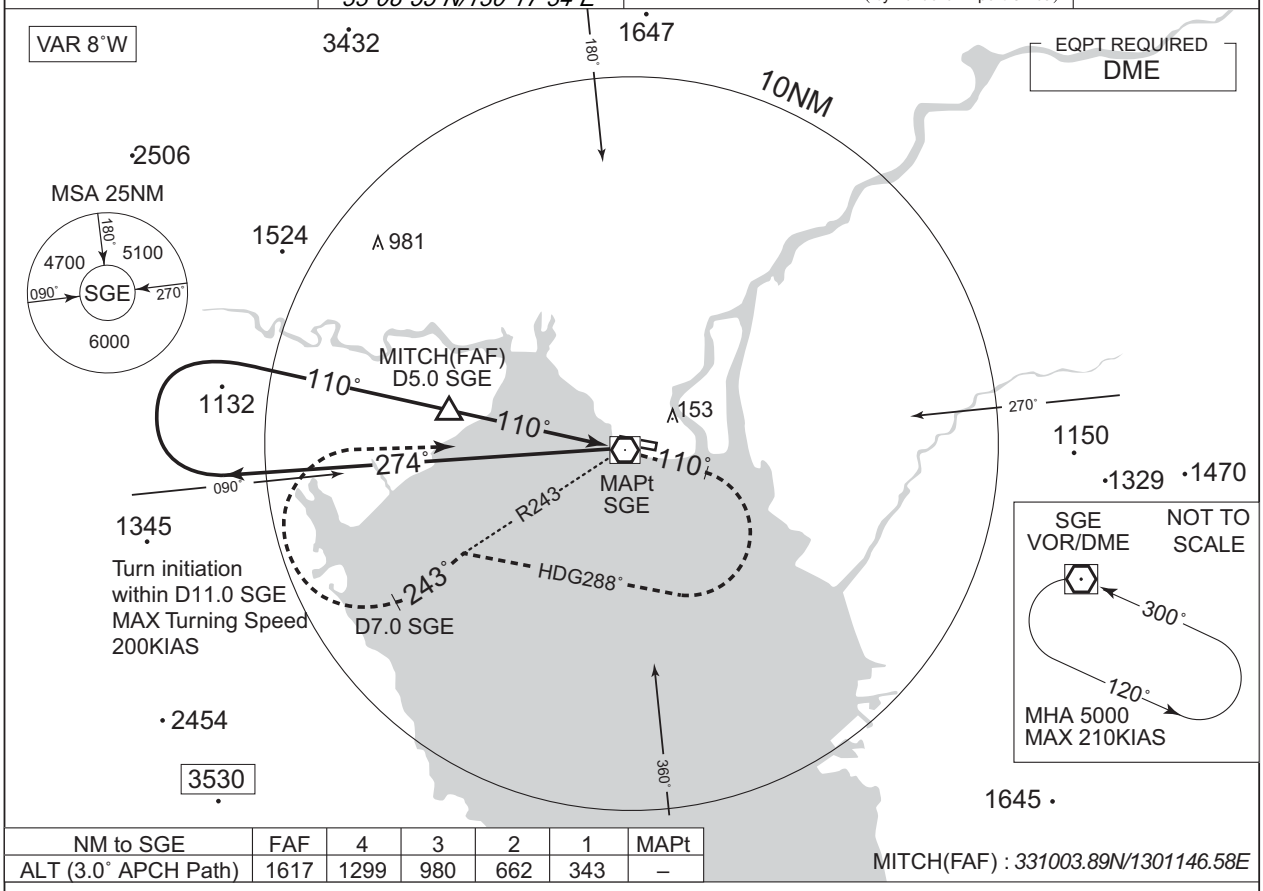

NM to SGE	FAF	4	3	2	1	MAPt
ALT (3.0° APCH Path)	1617	1299	980	662	343	–

MITCH(FAF) : *331003.89N/1301146.58E*

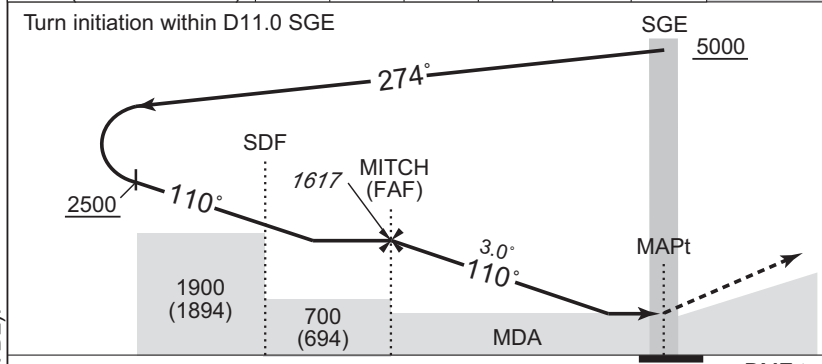

MISSED APPROACH

Climb to 500FT via SGE R110, turn right HDG288° to intercept and proceed via SGE R243 to 7.0DME, turn right, direct to SGE VOR/DME and hold at 5000FT.
Contact FUKUOKA RADAR.

Timing not authorized for defining the MAPt.

8.0	5.0	0.1	DME to SGE
7.9	4.9	0	NM to THR

MINIMA THR elev. 6 AD elev. 6

CAT			CIRCLING	
	MDA(H)	CMV	MDA(H)	VIS
A	330 (324)	1200	360 (354)	1600
B	340 (334)	1300	460 (454)	
C	370 (364)	1400		2400
D	390 (384)	1600	560 (554)	3200

Circling to SOUTH side of RWY only.

CHANGE : ATC(TOWER, RADAR, ATIS AVBL).

INSTRUMENT APPROACH CHART

RJFS / SAGA — RNP RWY29(AR)

FUKUOKA RADAR 119.7 - 279.2	RNP AR RF required.	SAGA TOWER 118.025 - 232.2	2130 - 2300(UTC) 1030 - 1500(UTC) SAGA RADIO 118.025 AFIS provided by Fukuoka Airport Office	RADAR AVBL ATIS 126.825

For uncompensated Baro-VNAV systems, procedure not authorized below -10°C / above 45°C

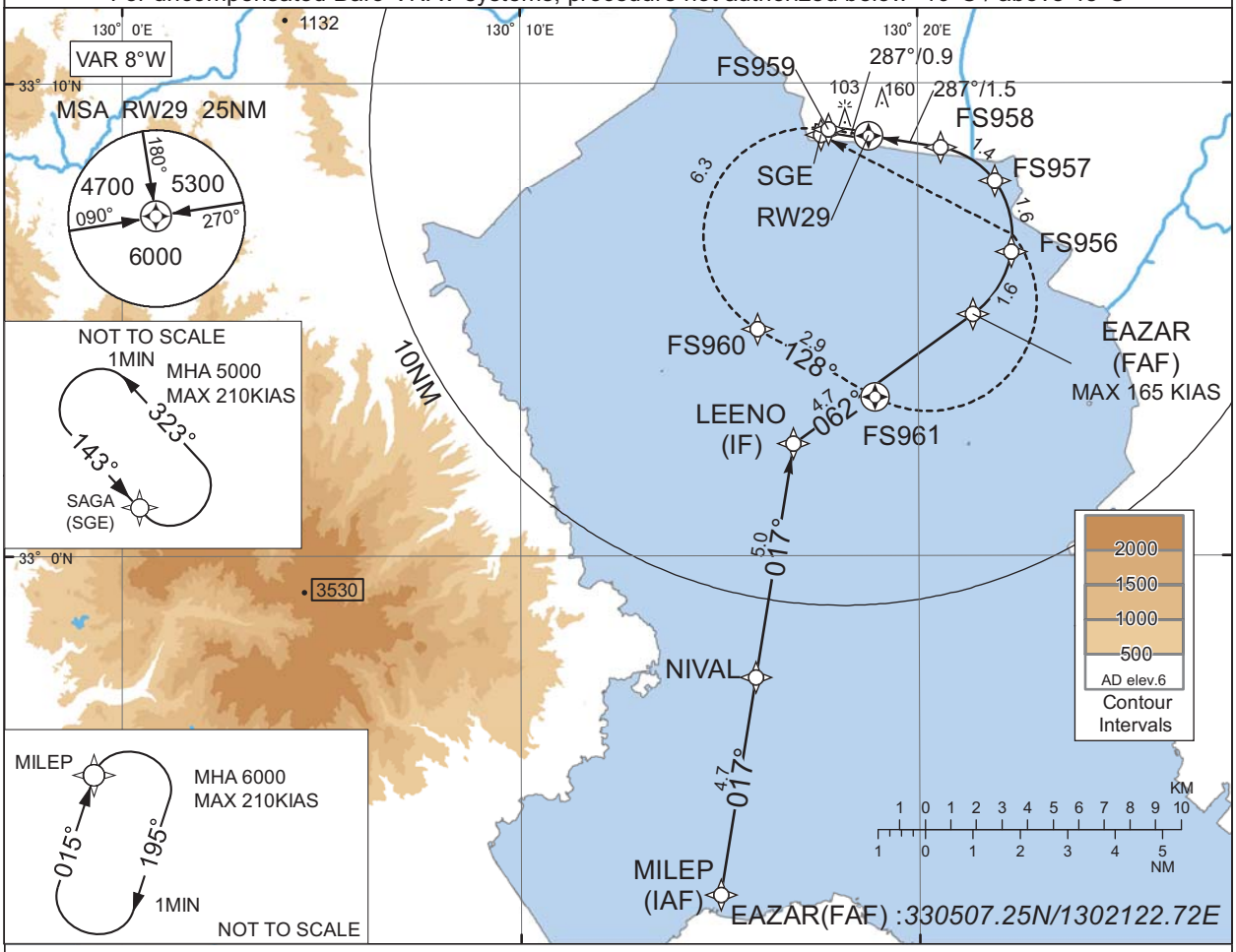

MISSED APPROACH

Climb to 5000FT, to FS959, to FS960 via fixed radius turn, to FS961 on course 128°, turn left, direct to SGE and hold.
Contact FUKUOKA RADAR.

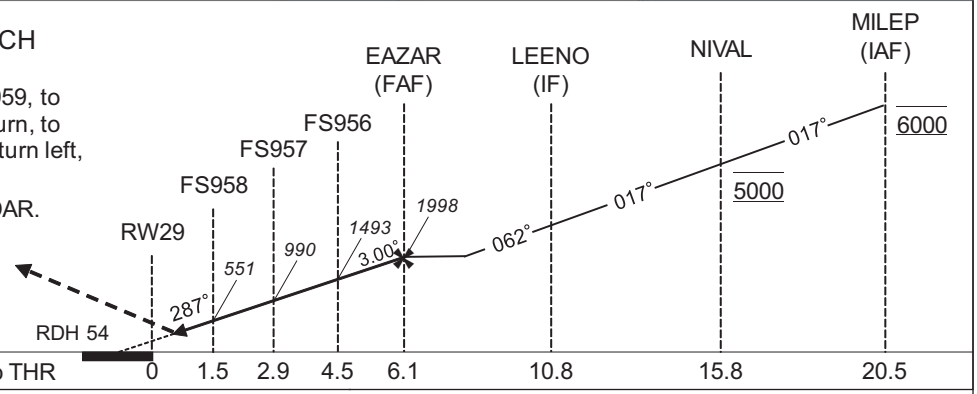

Missed APCH climb gradient MNM 5.0%

MINIMA	THR elev. 6	AD elev. 6		
CAT	RNP 0.10		RNP 0.30	
	DA(H)	RVR/CMV	DA(H)	RVR/CMV
A	-	-	-	-
B				
C	256(250)	800	306(300)	1000
D		1200		1400

MINIMA with Missed APCH climb gradient of 2.5% are not established.

Authorization Required

CHANGE : ATC(TOWER, RADAR, ATIS AVBL).

INSTRUMENT APPROACH CHART

RJFS / SAGA

RNP RWY29(AR)

CHANGE : Waypoint (FS959, FS960, FS961) established. RF Arc Center (FSRF2) established. RNP Value. HLDG pattern added. Waypoint (FS955) abolished. VAR.

Coding Table

Serial Number	Path Descriptor	Waypoint Identifier	Fly Over	Course °M(°T)	Magnetic Variation	Distance (NM)	Turn Direction	Altitude (FT)	Speed (KIAS)	VPA/ RDH (°/FT)	RNP Value
001	IF	MILEP	-	-	-7.9	-	-	6000	-	-	-
002	TF	NIVAL	-	017 (009.2)	-7.9	4.7	-	5000	-	-	0.3
003	TF	LEENO	-	017 (009.2)	-7.9	5.0	-	-	-	-	0.3
004	TF	EAZAR	-	062 (054.2)	-7.9	4.7	-	1998	-165	-	0.3
005	RF Center: FSRF8 r=2.02NM	FS956	-	-	-7.9	1.6	L	1493	-	-3.00	0.10 0.30
006	RF Center: FSRF9 r=1.98NM	FS957	-	-	-7.9	1.6	L	990	-	-3.00	0.10 0.30
007	RF Center: FSRF0 r=1.75NM	FS958	-	-	-7.9	1.4	L	551	-	-3.00	0.10 0.30
008	TF	RW29	Y	287 (279.3)	-7.9	1.5	-	60	-	-3.00/54	0.10 0.30
009	TF	FS959	-	287 (279.3)	-7.9	0.9	-	-	-	-	0.10 0.30
010	RF Center: FSRF2 r=2.28NM	FS960	-	-	-7.9	6.3	L	-	-	-	1.0
011	CF	FS961	Y	128 (120.3)	-7.9	2.9	-	-	-	-	1.0
012	DF	SGE	-	-	-7.9	-	L	5000	-	-	1.0

Path	Waypoint Identifier	Inbound Course °M(°T)	Magnetic Variation	Outbound Time (MIN)	Turn Direction	Minimum Altitude (FT)	Maximum Altitude (FT)	Speed (KIAS)	RNP Value
Hold	MILEP	015 (007.6)	-7.9	1.0(-14000)	R	6000	FL140	-210 (-14000)	1.0
Hold	SGE	143 (134.8)	-7.9	1.0(-14000)	L	5000	FL140	-210 (-14000)	1.0

Waypoint Coordinates

Waypoint Identifier	Coordinates	RF Arc Center Identifier	Coordinates
MILEP	*325250.49N / 1301501.22E*	FSRF8	*330645.72N / 1301958.78E*
NIVAL	*325726.55N / 1301554.33E*	FSRF9	*330646.63N / 1302001.15E*
LEENO	*330223.31N / 1301651.53E*	FSRF0	*330654.73N / 1302014.52E*
EAZAR	*330507.25N / 1302122.72E*	FSRF2	*330647.02N / 1301719.68E*
FS956	*330626.19N / 1302220.91E*		
FS957	*330756.35N / 1302156.32E*		
FS958	*330838.87N / 1302034.72E*		
RW29	*330853.77N / 1301846.08E*		
FS959	*330902.03N / 1301745.78E*		
FS960	*330448.74N / 1301558.06E*		
FS961	*330322.31N / 1301854.74E*		
SGE	*330855.03N / 1301734.43E*		

INSTRUMENT APPROACH CHART

RJFS / SAGA — RNP RWY11(AR)

FUKUOKA RADAR 119.7 - 279.2	RNP AR RF required.	SAGA TOWER 118.025 - 232.2	2130 - 2300(UTC) 1030 - 1500(UTC) SAGA RADIO 118.025 AFIS provided by Fukuoka Airport Office	RADAR AVBL ATIS 126.825

For uncompensated Baro-VNAV systems, procedure not authorized below -10°C / above 45°C

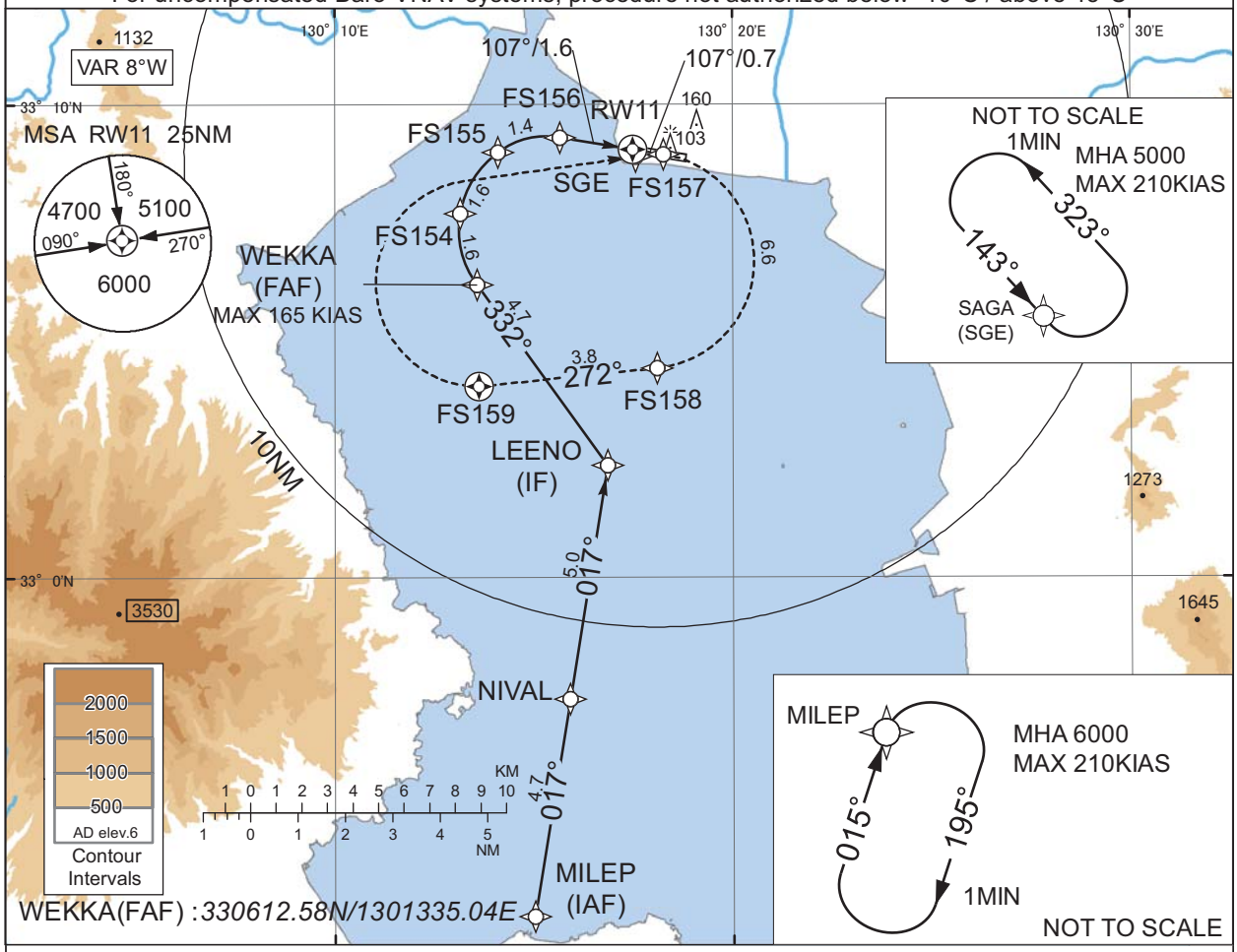

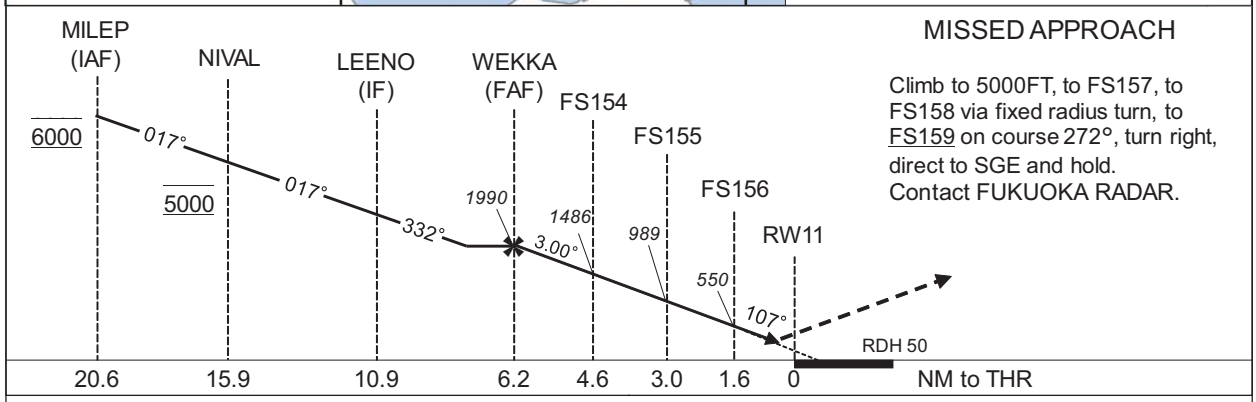

MISSED APPROACH

Climb to 5000FT, to FS157, to FS158 via fixed radius turn, to FS159 on course 272°, turn right, direct to SGE and hold.
Contact FUKUOKA RADAR.

Missed APCH climb gradient MNM 5.0%

MINIMA THR elev. 6 AD elev. 6

CAT	RNP 0.10		RNP 0.30	
	DA(H)	CMV	DA(H)	CMV
A	-	-	-	-
B				
C	256(250)	1200	309(303)	1400
D		1400		1600

MINIMA with Missed APCH climb gradient of 2.5% are not established.

Authorization Required

CHANGE : ATC(TOWER, RADAR, ATIS AVBL).

INSTRUMENT APPROACH CHART

RJFS / SAGA

RNP RWY11(AR)

CHANGE : Waypoint (FS157, FS158, FS159) established. RF Arc Center (FSRF1) established. RNP Value. HLDG pattern added. Waypoint (FS153) abolished. VAR.

Coding Table

Serial Number	Path Descriptor	Waypoint Identifier	Fly Over	Course °M(°T)	Magnetic Variation	Distance (NM)	Turn Direction	Altitude (FT)	Speed (KIAS)	VPA/ RDH (°/FT)	RNP Value
001	IF	MILEP	-	-	-7.9	-	-	6000	-	-	-
002	TF	NIVAL	-	017 (009.2)	-7.9	4.7	-	5000	-	-	0.3
003	TF	LEENO	-	017 (009.2)	-7.9	5.0	-	-	-	-	0.3
004	TF	WEKKA	-	332 (324.3)	-7.9	4.7	-	1990	-165	-	0.3
005	RF Center: FSRF5 r=2.02NM	FS154	-	-	-7.9	1.6	R	1486	-	-3.00	0.10 0.30
006	RF Center: FSRF6 r=1.98NM	FS155	-	-	-7.9	1.6	R	989	-	-3.00	0.10 0.30
007	RF Center: FSRF7 r=1.77NM	FS156	-	-	-7.9	1.4	R	550	-	-3.00	0.10 0.30
008	TF	RW11	Y	107 (099.3)	-7.9	1.6	-	56	-	-3.00/50	0.10 0.30
009	TF	FS157	-	107 (099.3)	-7.9	0.7	-	-	-	-	0.10 0.30
010	RF Center: FSRF1 r=2.28NM	FS158	-	-	-7.9	6.6	R	-	-	-	1.0
011	CF	FS159	Y	272 (264.2)	-7.9	3.8	-	-	-	-	1.0
012	DF	SGE	-	-	-7.9	-	R	5000	-	-	1.0

Path	Waypoint Identifier	Inbound Course °M(°T)	Magnetic Variation	Outbound Time (MIN)	Turn Direction	Minimum Altitude (FT)	Maximum Altitude (FT)	Speed (KIAS)	RNP Value
Hold	MILEP	015 (007.6)	-7.9	1.0(-14000)	R	6000	FL140	-210 (-14000)	1.0
Hold	SGE	143 (134.8)	-7.9	1.0(-14000)	L	5000	FL140	-210 (-14000)	1.0

Waypoint Coordinates

Waypoint Identifier	Coordinates	RF Arc Center Identifier	Coordinates
MILEP	*325250.49N / 1301501.22E*	FSRF5	*330723.51N / 1301531.82E*
NIVAL	*325726.55N / 1301554.33E*	FSRF6	*330723.80N / 1301529.68E*
LEENO	*330223.31N / 1301651.53E*	FSRF7	*330735.05N / 1301520.05E*
WEKKA	*330612.58N / 1301335.04E*	FSRF1	*330642.73N / 1301750.06E*
FS154	*330742.91N / 1301309.63E*		
FS155	*330900.65N / 1301406.71E*		
FS156	*330919.21N / 1301540.15E*		
RW11	*330904.20N / 1301729.91E*		
FS157	*330857.86N / 1301816.20E*		
FS158	*330426.51N / 1301806.37E*		
FS159	*330403.61N / 1301337.58E*		
SGE	*330855.03N / 1301734.43E*		

INSTRUMENT APPROACH CHART

RJFS/SAGA VOR A

FUKUOKA RADAR	SAGA VOR/DME	SAGA TOWER		RADAR AVBL
119.7 – 279.2	114.75 SGE CH-94Y 33°08′55″N/130°17′34″E	118.025 – 232.2	2130–2300(UTC) 1030–1500(UTC) SAGA RADIO 118.025 AFIS provided by Fukuoka Airport Office	ATIS 126.825

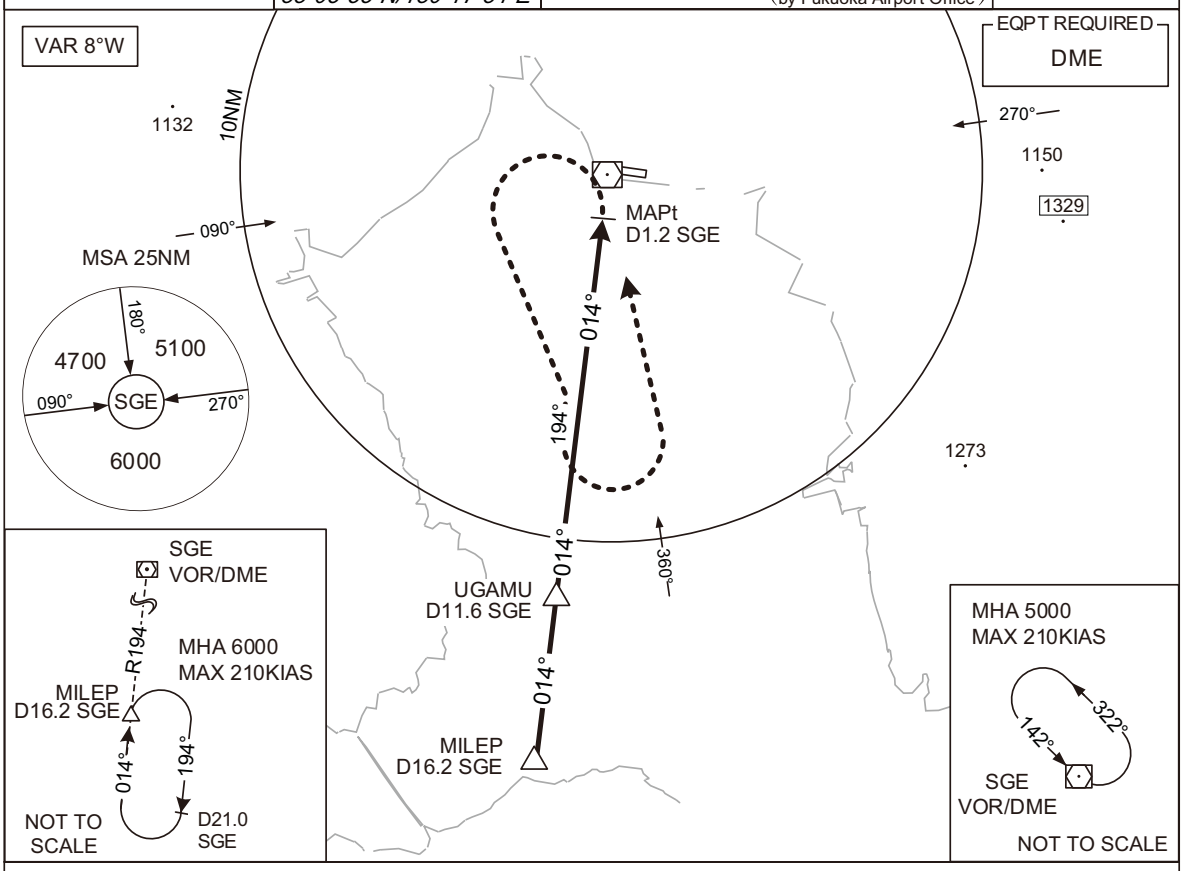

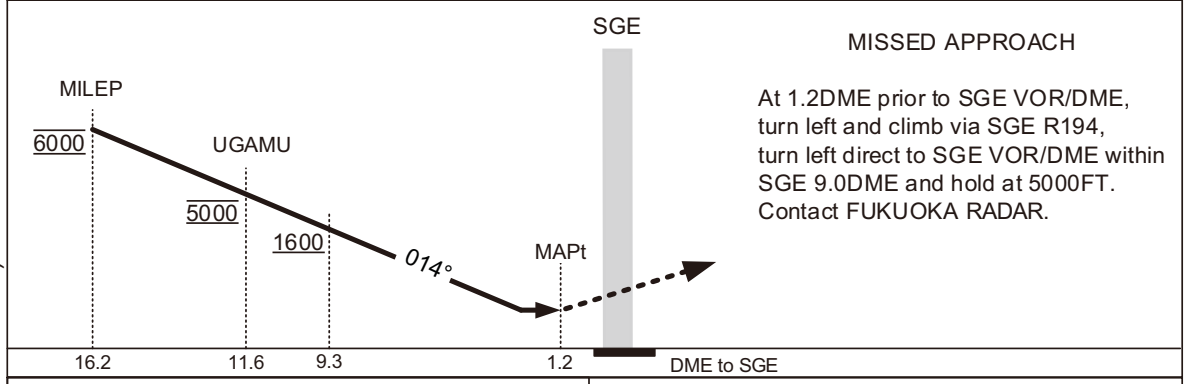

MISSED APPROACH

At 1.2DME prior to SGE VOR/DME, turn left and climb via SGE R194, turn left direct to SGE VOR/DME within SGE 9.0DME and hold at 5000FT. Contact FUKUOKA RADAR.

MINIMA AD elev. 6

CAT	CIRCLING	
	MDA(H)	VIS
A	360(354)	1600
B	460(454)	
C		2400
D	560(554)	3200

Circling to SOUTH side of RWY only.

CHANGE : ATC(TOWER, RADAR, ATIS AVBL).

INSTRUMENT APPROACH CHART

RJFS/SAGA VOR B

FUKUOKA RADAR	SAGA VOR/DME	SAGA TOWER		RADAR AVBL
119.7 – 279.2	114.75 SGE CH-94Y *33°08′55″N/130°17′34″E*	118.025 – 232.2	2130–2300(UTC) 1030–1500(UTC) SAGA RADIO 118.025 AFIS provided by Fukuoka Airport Office	ATIS 126.825

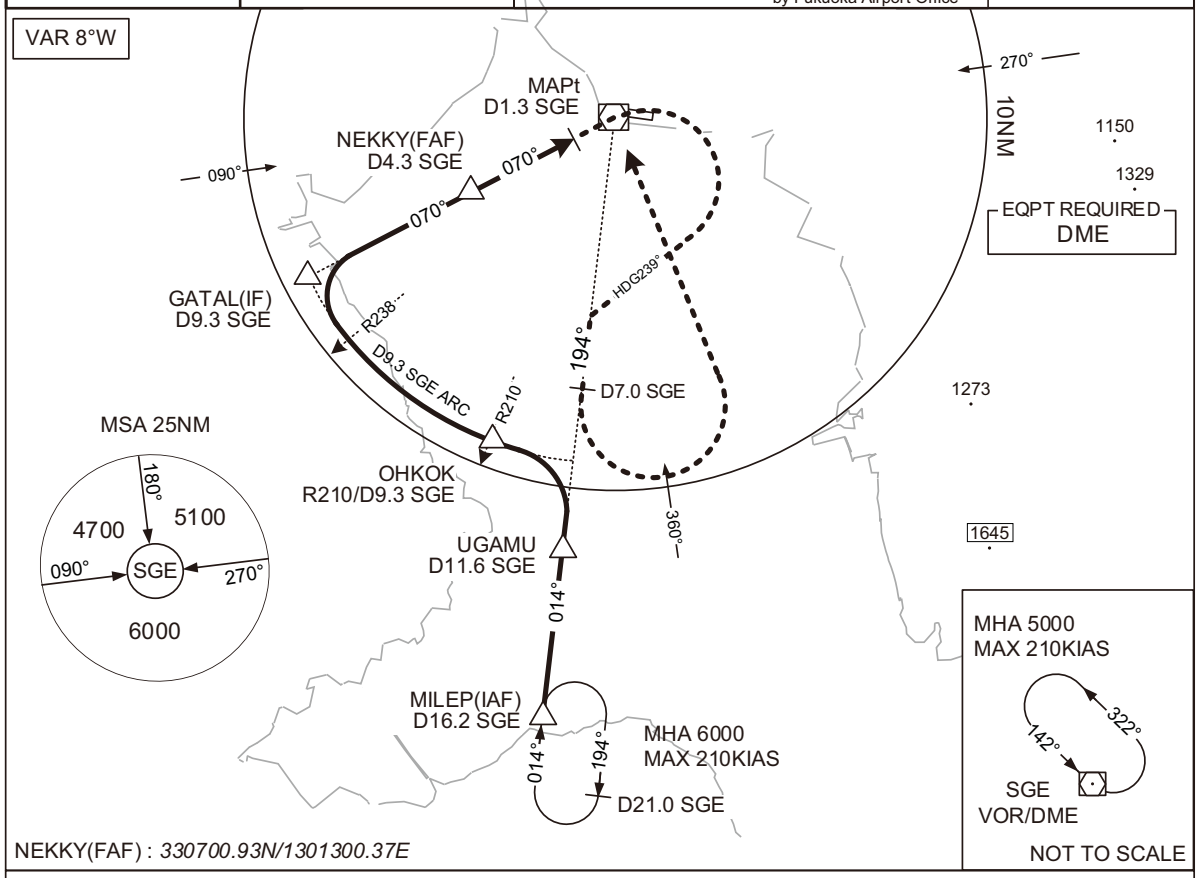

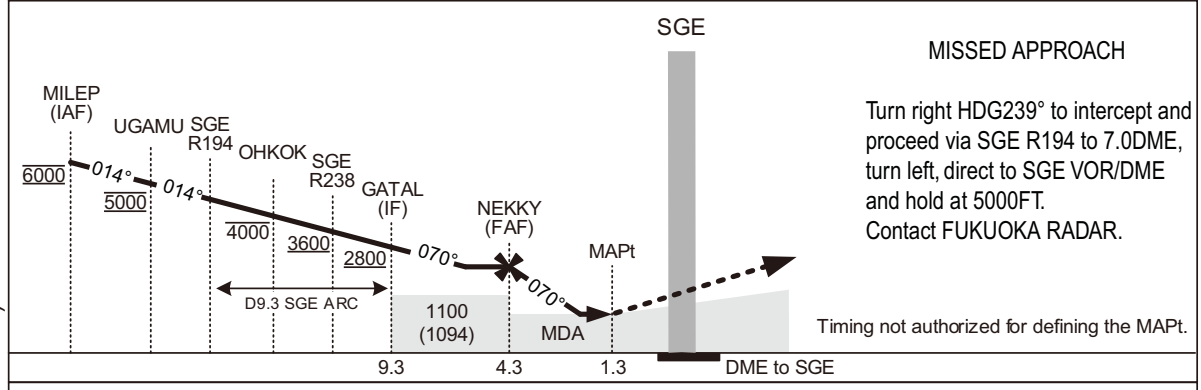

MISSED APPROACH

Turn right HDG239° to intercept and proceed via SGE R194 to 7.0DME, turn left, direct to SGE VOR/DME and hold at 5000FT.
Contact FUKUOKA RADAR.

Timing not authorized for defining the MAPt.

Missed APCH climb gradient MNM 5.0%

MINIMA		AD elev. 6
CAT	CIRCLING	
	MDA(H)	VIS
A	360(354)	1600
B	460(454)	
C		2400
D	560(554)	3200

Circling to SOUTH side of RWY only.

CHANGE : ATC(TOWER, RADAR, ATIS AVBL).

INSTRUMENT APPROACH CHART

RJFS/SAGA VOR C

FUKUOKA RADAR	SAGA VOR/DME	SAGA TOWER		RADAR AVBL
119.7 – 279.2	114.75 SGE CH-94Y 33°08′55″N/130°17′34″E	118.025 – 232.2	2130–2300(UTC) 1030–1500(UTC) SAGA RADIO 118.025 AFIS provided by Fukuoka Airport Office	ATIS 126.825

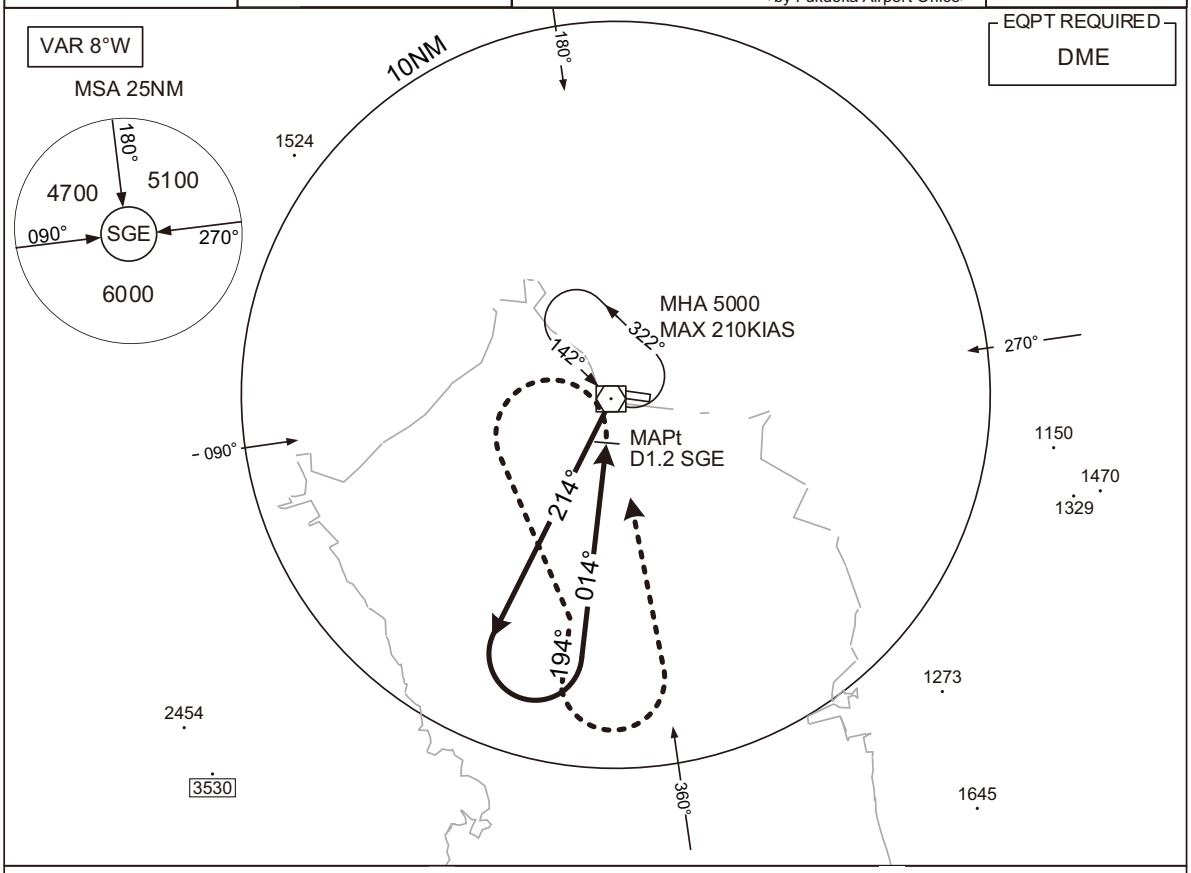

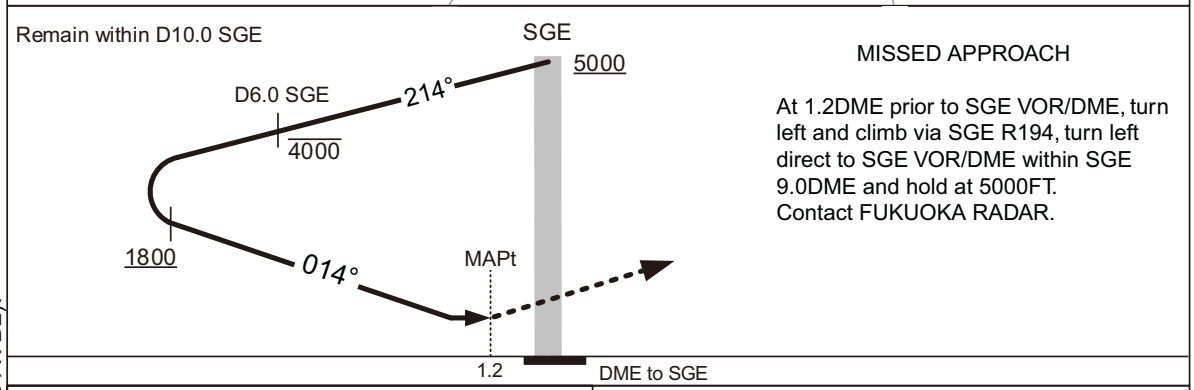

MISSED APPROACH

At 1.2DME prior to SGE VOR/DME, turn left and climb via SGE R194, turn left direct to SGE VOR/DME within SGE 9.0DME and hold at 5000FT.
Contact FUKUOKA RADAR.

MINIMA AD elev. 6

CAT	CIRCLING	
	MDA(H)	VIS
A	360(354)	1600
B	460(454)	
C		2400
D	560(554)	3200

Circling to SOUTH side of RWY only.

CHANGE : ATC(TOWER, RADAR, ATIS AVBL).

RJFS / SAGA

Visual REP

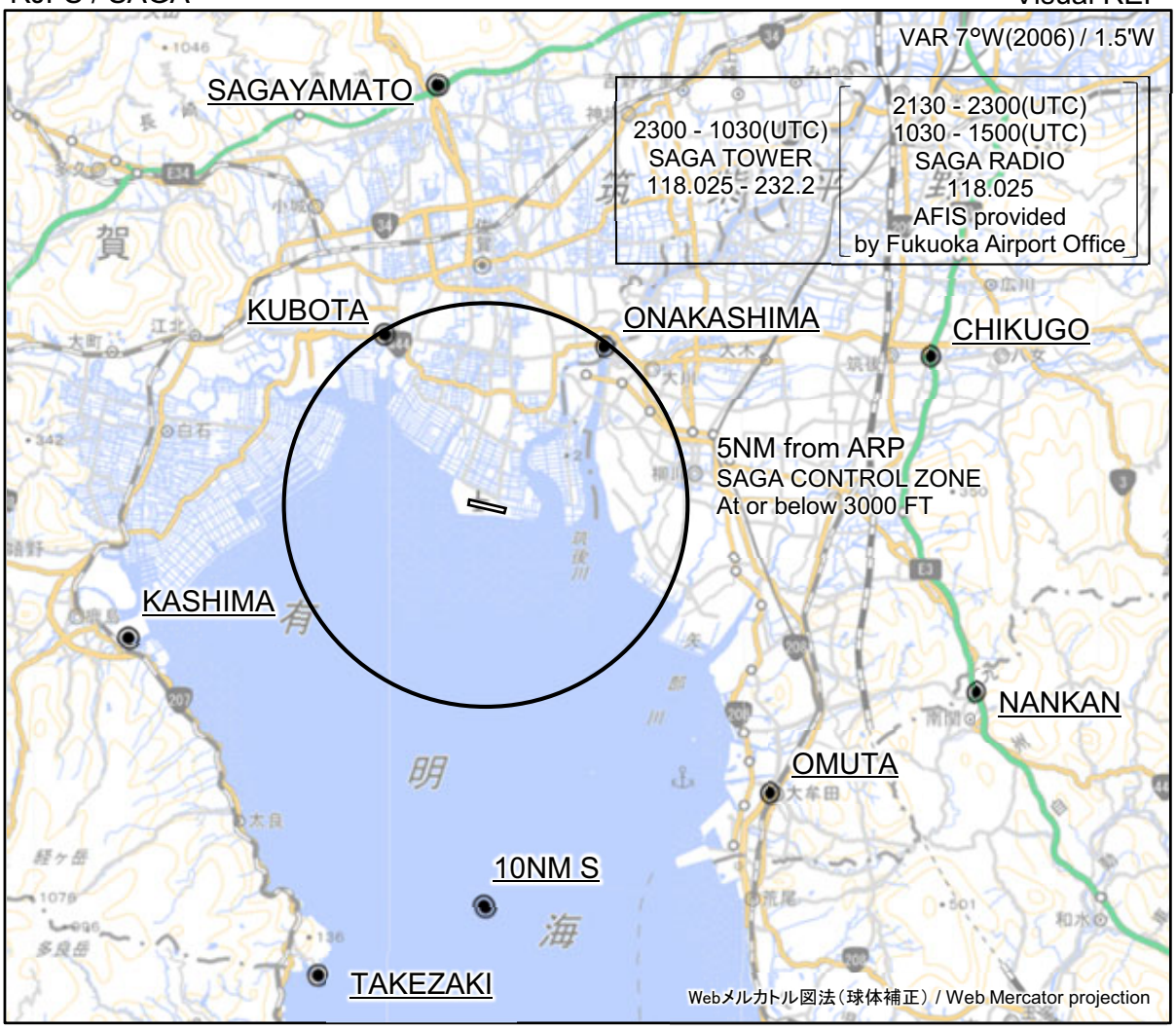

※図中に標高を示す数字がある場合、単位はメートル(m)である。The unit of measurement used to express elevation is meter(m).

CHANGE : ATC(TOWER, RADAR, ATIS AVBL). CONTROL ZONE established. INFORMATION ZONE abolished.

Call sign	BRG / DIST from ARP	Remarks
佐賀大和 Sagayamato	353°T / 10.4NM	佐賀大和インターチェンジ Interchange
久保田 Kubota	329°T / 4.9NM	久保田橋 Bridge
大中島 Onakashima	037°T / 4.9NM	筑後川昇開橋 Bridge
筑後 Chikugo	072°T / 11.7NM	八女インターチェンジ Interchange
鹿島 Kashima	249°T / 9.5NM	新浜大橋 Bridge
南関 Nankan	111°T / 13.1NM	南関インターチェンジ Interchange
大牟田 Omuta	135°T / 10.1NM	JR大牟田駅 Station
10NM S	180°T / 10.0NM	海上 Over the sea
竹崎 Takezaki	200°T / 12.4NM	竹崎港 Harbor

RJFS / SAGA BALLOON

熱気球の飛行が下図区域内で行われる。（期間：5月中旬から6月中旬まで及び10月中旬から2月下旬まで：RJFSノータム参照）

Hot air balloon flight will be conducted within below area.
(Period: from mid MAY to mid JUN and from mid OCT to late FEB: see NOTAM RJFS)

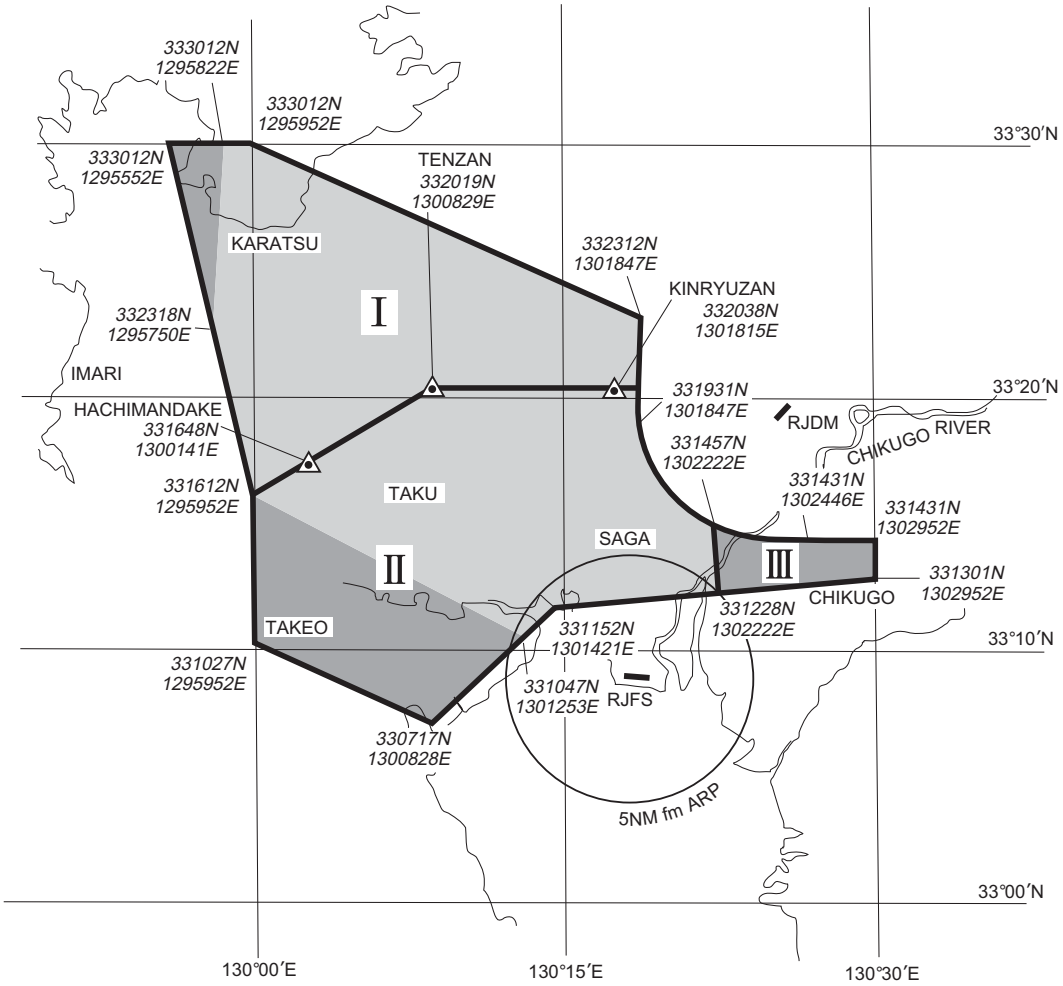

飛行高度 3000ft 以下
FLT ALT At or below 3000ft

飛行高度 4000ft 以下
FLT ALT At or below 4000ft

I Balloon FLT area Nr1 II Balloon FLT area Nr2* III Balloon FLT area Nr3*

* 佐賀空港を発着する航空機に対し、熱気球に係る情報（飛行空域2及び3内で飛行する気球の概数等）の提供が佐賀タワー又は佐賀レディオにより行われる。

* The information of hot air balloon(aprx number of balloon etc.in flight area number 2 and 3) will be provided for departing/arriving acft from/to SAGA airport by SAGA TOWER / SAGA RADIO.
Example of phraseology:"Two flying balloons reported in balloon flight area number two."

CHANGE : ATC(SAGA TOWER established).

RJFS / SAGA

Minimum Vectoring Altitude CHART

VAR 7˚W (2025)

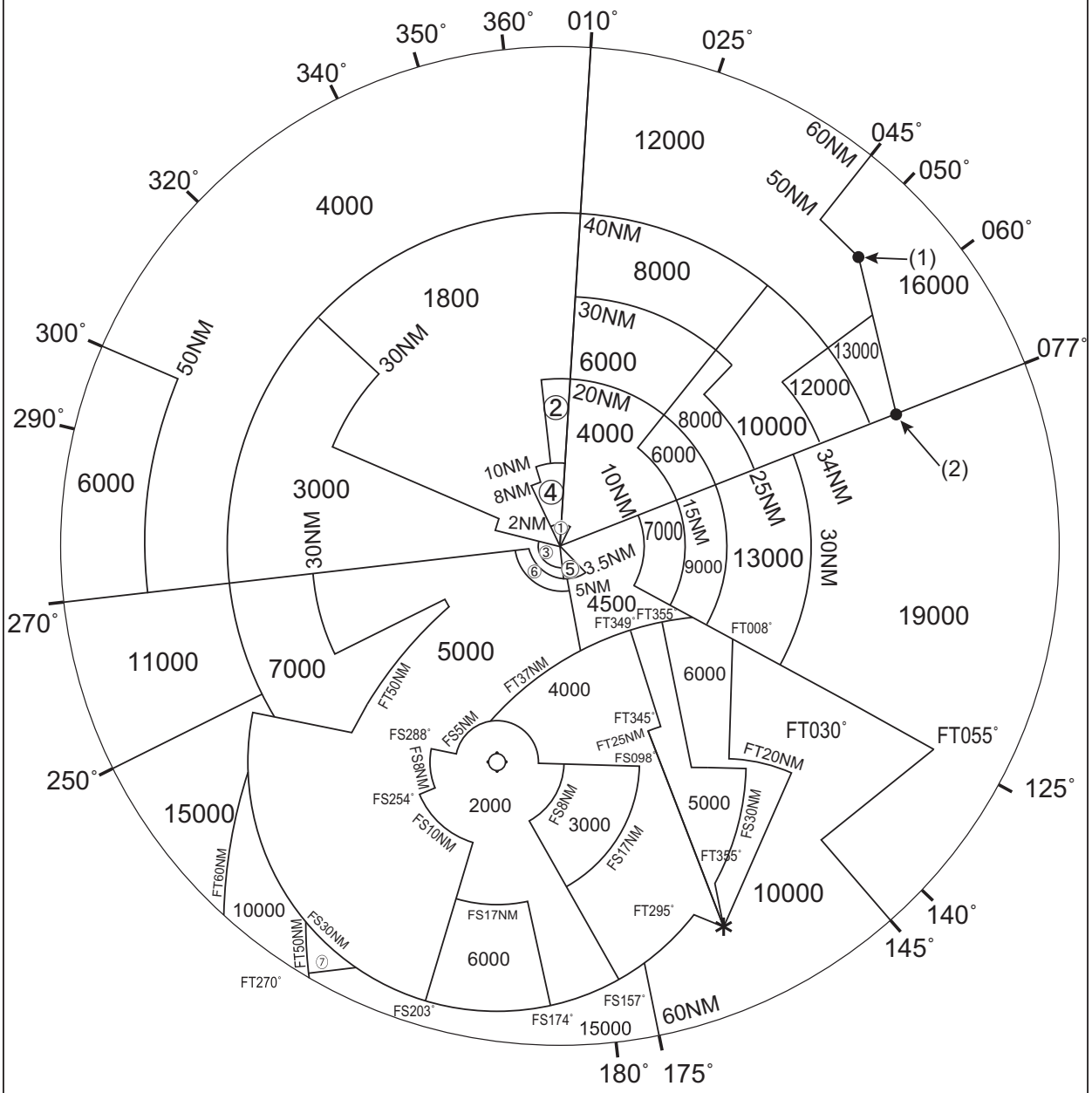

① 1900
② 2000
③ 2200
④ 2300
⑤ 2400
⑥ 3300
⑦ 9000

(1) *340934N/1311037E*
(2) *334939N/1311445E*

CENTER : *333504N/1302706E* (RJFF ARP)
CENTER : *330908N/1301817E* (RJFS RADAR SITE)
∗ : *325011N/1305203E* (RJFT RADAR SITE)

CHANGE : Latitude and longitude of (2). Update(BTN 125° and 250°).