RJOI/IWAKUNI

AD CHART

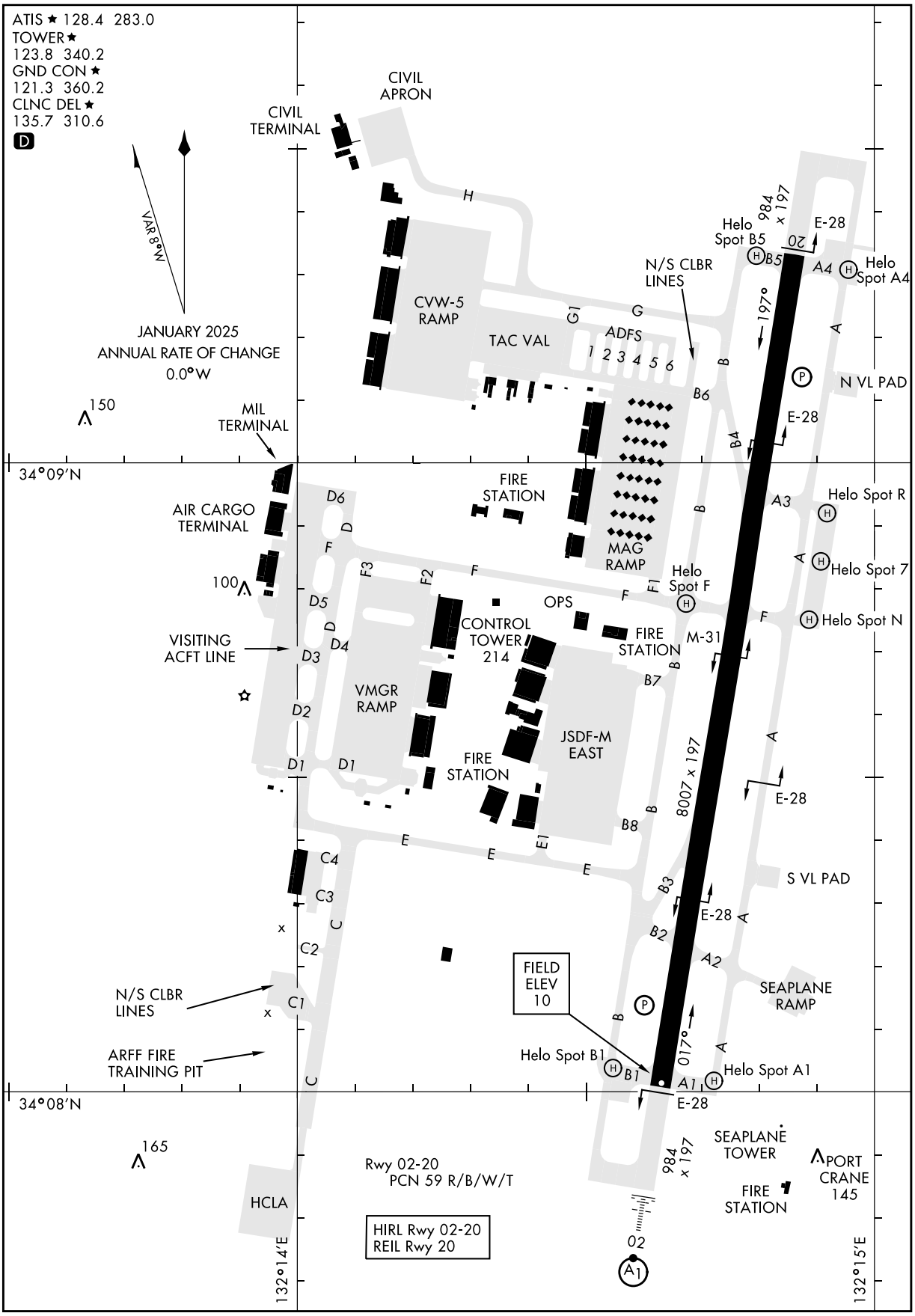

CHANGE : Update.

NOTE: REPRINTING DOD FLIP

RJOI / IWAKUNI

Aircraft Parking / Docking Chart

IWAKUNI AERODROME

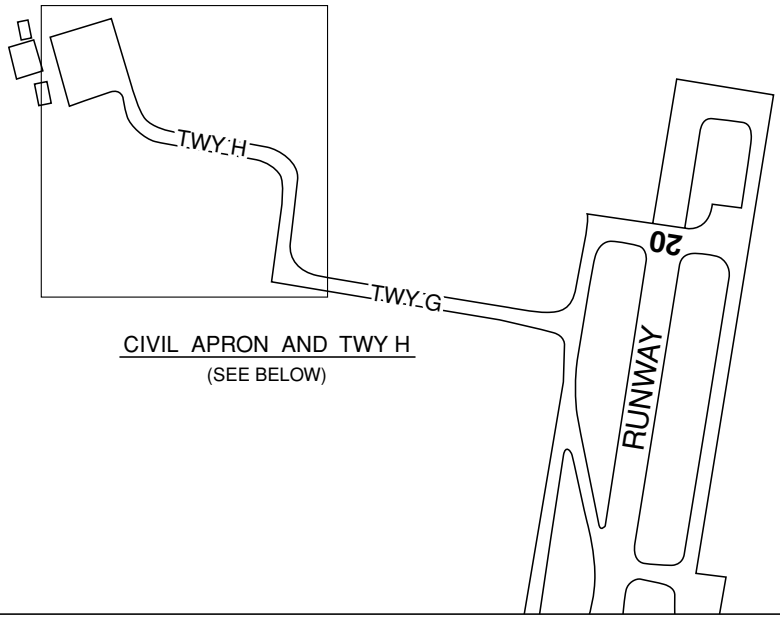

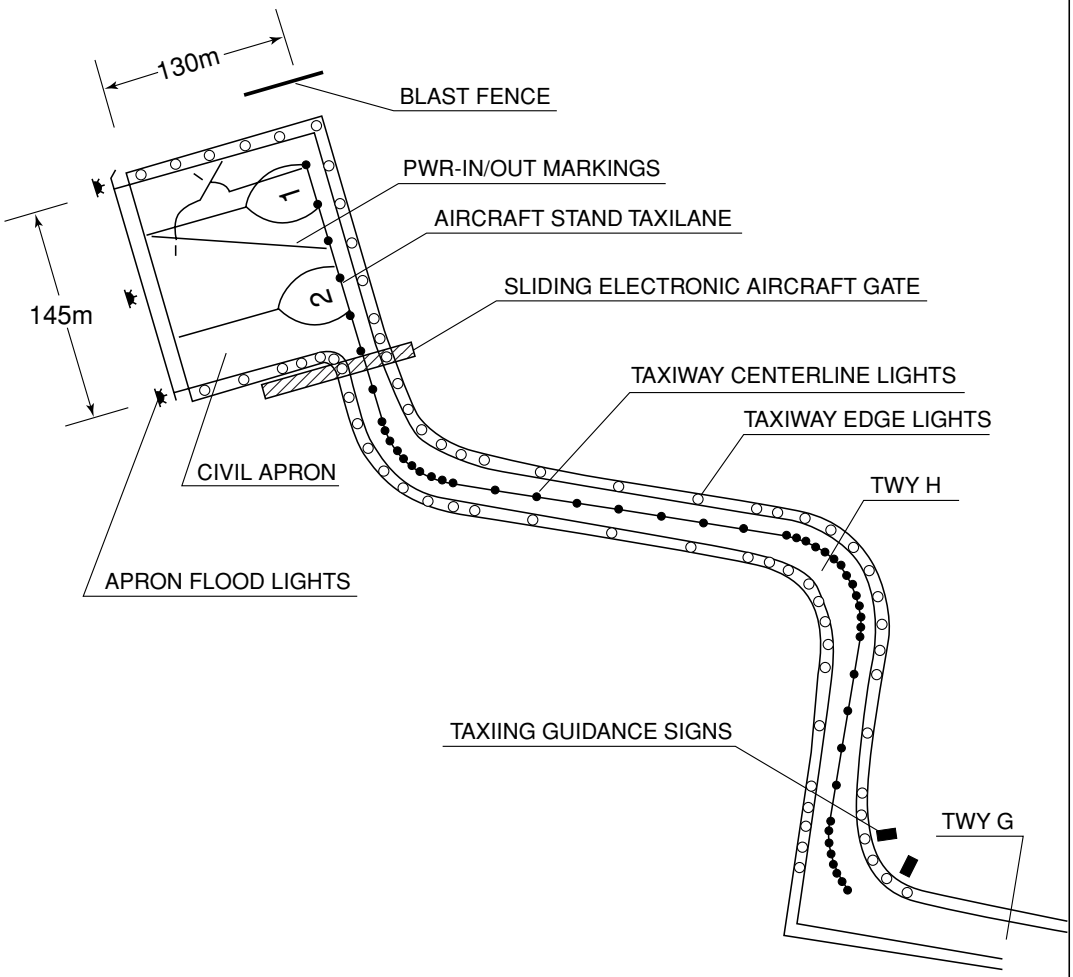

STANDARD DEPARTURE CHART - INSTRUMENT

RJOI / IWAKUNI MATSUYAMA SE FOUR DEPARTURE(OBSTACLE)(RNAV)

ATIS ★ 128.4 283.0
CLNC DEL ★
135.7 310.6
GND CON ★
121.3 360.2
TOWER ★
123.8 340.2
DEP CON ★
131.4 363.8

RNAV1-DME/DME/IRU,
DME/DME, GNSS, or RNP 2.0

Rwy	Knots	60	120	180	240	300	360
* 02 ⓐ	V/V(fpm)	230	460	690	920	1150	1650
† 02/20 ⓑ	V/V(fpm)	280	560	840	1120	1400	1680
† 20 ⓒ	V/V(fpm)	204	408	612	816	1020	1224

* Minimum † ATC Climb Rate

ⓐ to 2300
ⓑ MALTA transtion to 15,000 from MYE VOR/DME to MALTA
ⓒ to 6000 ●

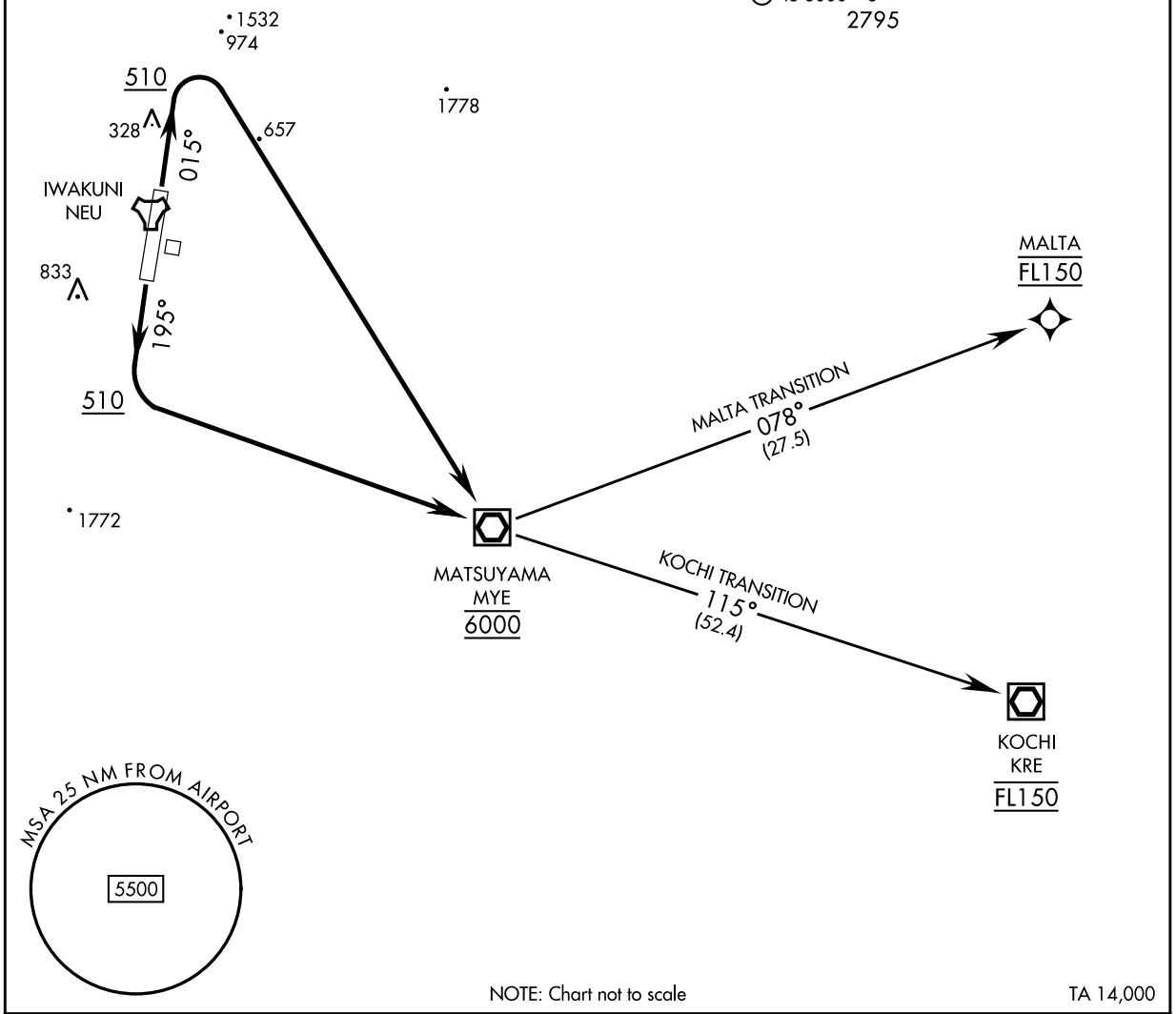

NOTE: Chart not to scale

TA 14,000

DEPARTURE ROUTE DESCRIPTION

TAKEOFF RWY 02: Climb heading 015° to 510, then climbing right turn direct to cross MYE VOR/DME at 6000, thence...

TAKEOFF RWY 20: Climb heading 195° to 510, then climbing left turn direct to cross MYE VOR/DME at 6000, thence...

KOCHI TRANSITION: ...from over MYE VOR/DME climbing track 115° to cross KRE VOR/DME at FL150. Maintain FL150 or higher as assigned.

MALTA TRANSITION: ...from over MYE VOR/DME climbing track 078° to cross MALTA at FL150. Maintain FL150 or higher as assigned.

CHANGE : Update.

NOTE: REPRINTING DOD FLIP

INSTRUMENT APPROACH CHART

RJOI / IWAKUNI

LOC/DME I-IJO	APCH CRS	Rwy ldg	8007
110.15	014°	TDZE	10
Chan 38(Y)		Arpt Elev	10

[USN]

ILS or LOC RWY02

RADAR or MYE VOR/DME required

* When ALS inop, increase vis to ¾ mile.
** When ALS inop, increase vis to 1 mile.
*** Circling not authorized W of Rwy 02-20. CAT D remain within 2.8 NM.

ALSF-1

MISSED APPROACH: Climb to 700 then climbing right turn to 6000 direct MYE VOR/DME and hold.

ATIS★	APP CON★	TOWER★	GND CON★	CLNC DEL★	ASR/PAR
128.4 283.0	131.4 236.2	123.8 340.2	121.3 360.2	135.7 310.6	

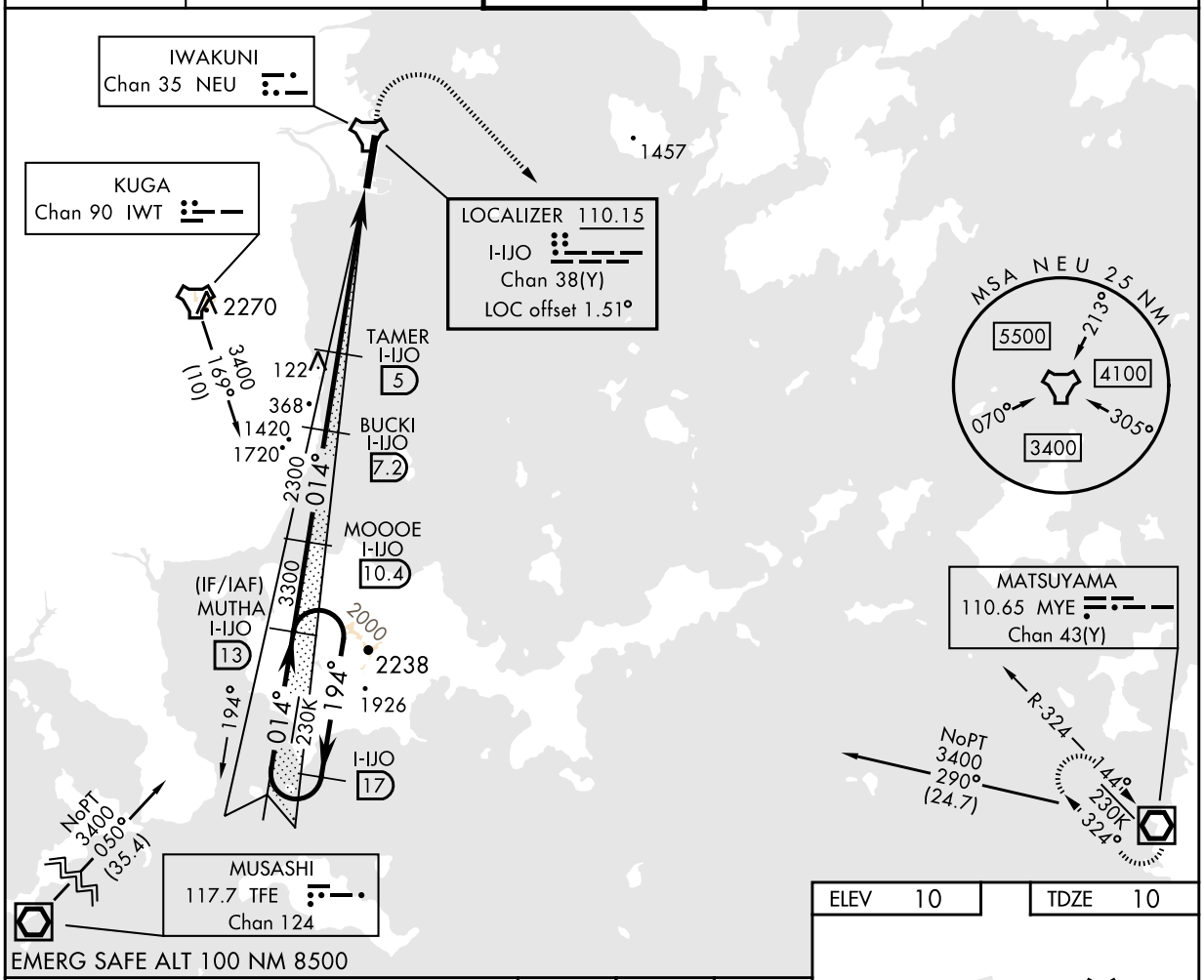

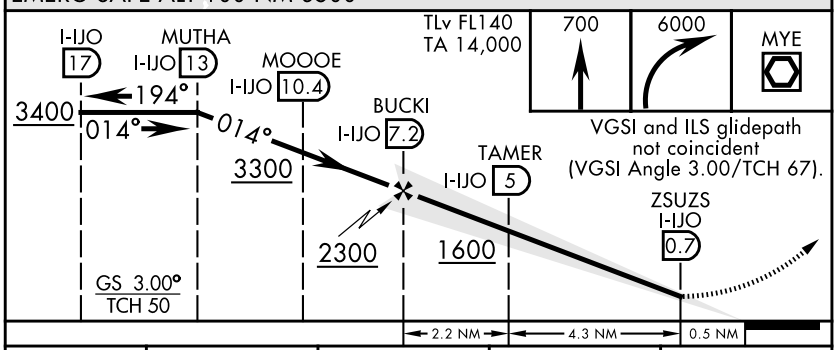

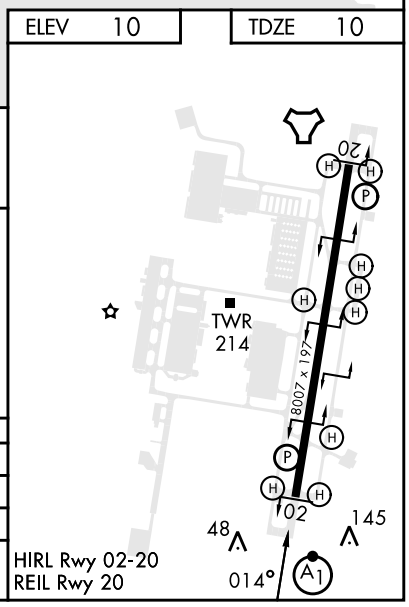

HIRL Rwy 02-20
REIL Rwy 20

CATEGORY	A	B	C	D
S-ILS 02*	260-½ 250 (300-½)			
S-LOC 02**	360-½ 350 (400-½)		360-⅝ 350 (400-⅝)	
C CIRCLING***	460-1 450 (500-1)		460-1½ 450 (500-1½)	560-2 550 (600-2)

CHANGE : Update.

NOTE: REPRINTING DOD FLIP

INSTRUMENT APPROACH CHART

RJOI / IWAKUNI

APCH CRS	Rwy ldg	8007
015°	THRE	10
	Arpt Elev	10

RNAV(GPS) RWY02

RNP APCH

* When ALS inop, increase vis to 7/8 mile.
** When ALS inop, increase CAT AB vis to 1 mile, CAT CD vis to 1 1/8 miles.
*** Circling not authorized W of Rwy 02-20. CAT D circling remain within 2.8 NM.

ALSF-1

MISSED APPROACH: Climb to 600 then climbing right turn to 6000 direct MYE VOR/DME and hold.

ATIS ★	APP CON ★	TOWER ★	GND CON ★	CLNC DEL ★	ASR/PAR
128.4 283.0	131.4 236.2	123.8 340.2	121.3 360.2	135.7 310.6	

Knots	60	120	180	240	300	360
V/V(fpm)	220	440	660	880	1100	1320

Min climb of 220 ft/NM to 1500 - Controlling Obstacle 1317

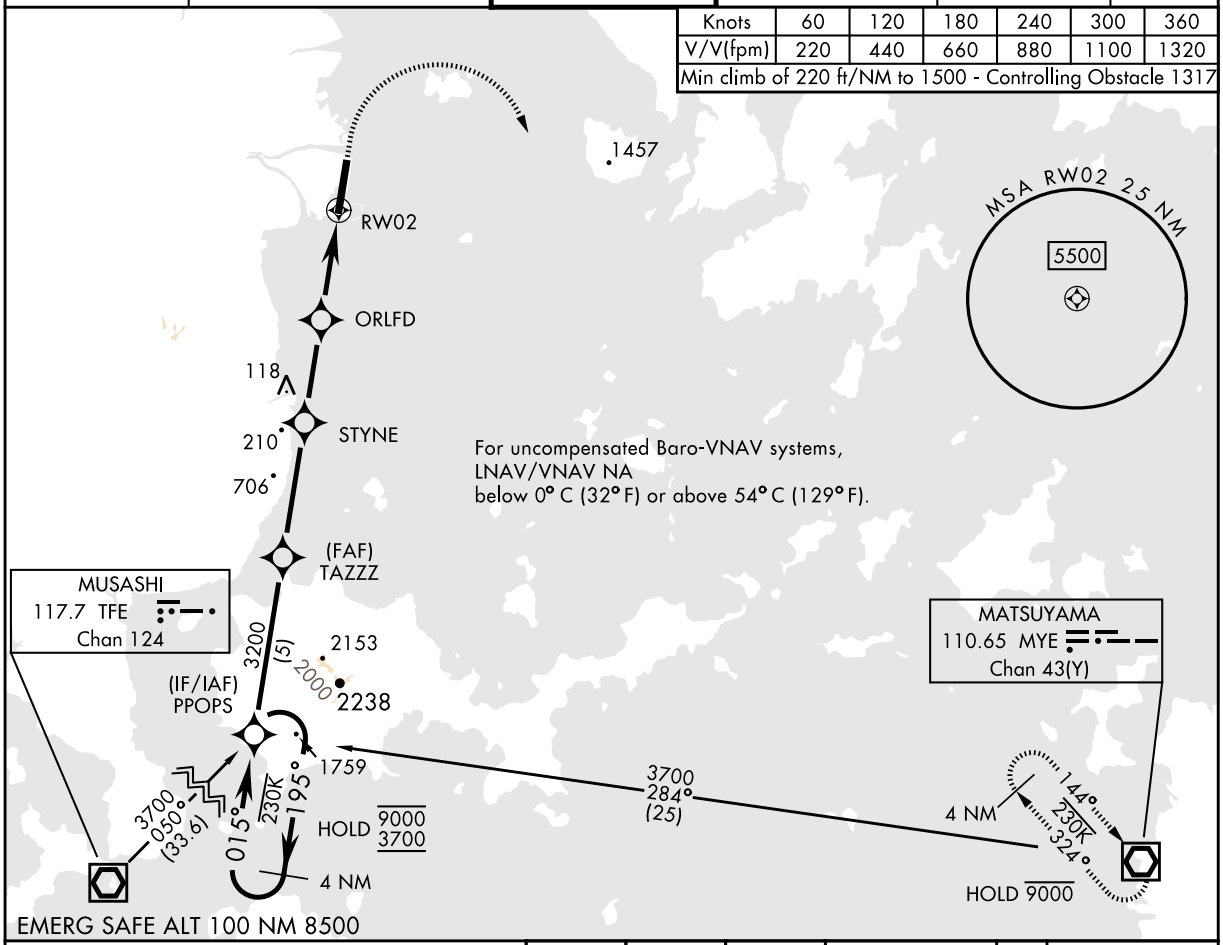

VGSI and glidepath not coincident
(VGSI Angle 3.00/TCH 67).

600 | 6000 | MYE

TLv FL140
TA 14,000

ELEV 10 | THRE 10

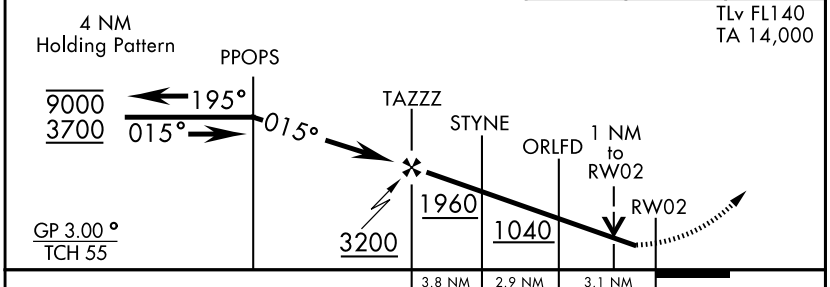

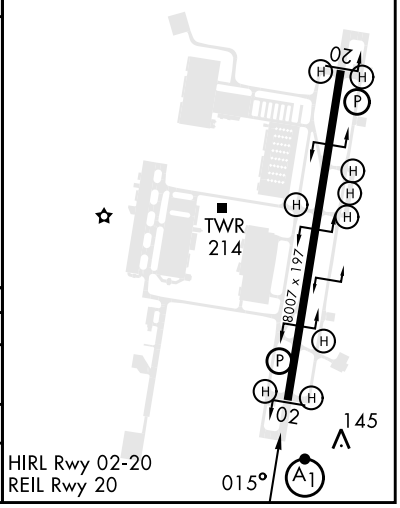

CATEGORY	A	B	C	D
LNAV/ * VNAV DA	276-½ 266 (300-½)	287-½ 277 (300-½)	295-½ 285 (300-½)	306-½ 296 (300-½)
LNAV MDA**	400- ½ 390 (400-½)		400-⅝ 390 (400-⅝)	
C *** CIRCLING	460-1 450 (500-1)		460-1½ 450 (500-1½)	560-2 550 (600-2)

HIRL Rwy 02-20
REIL Rwy 20

CHANGE : Update.

NOTE: REPRINTING DOD FLIP

INSTRUMENT APPROACH CHART

RJOI / IWAKUNI

APCH CRS	Rwy ldg	8007
195°	THRE	10
	Arpt Elev	10

RNAV(RNP) Z RWY20

RNP AR APCH - GPS

MISSED APPROACH: Climb to 3700 on track 195° to PPOPS and hold, continue climb-in-hold to 3700.

ATIS★	APP CON★	TOWER★	GND CON★	ASR/PAR
128.4 283.0	131.4 236.2	123.8 340.2	121.3 360.2	

Knots	60	120	180	240	300	360
V/V(fpm)	275	550	825	1100	1375	1650

Min climb of 275 ft/NM to 2500 - Controlling obstacle ukn

For uncompensated Baro-VNAV systems, procedure NA below 0°C (32°F) or above 54°C (129°F).

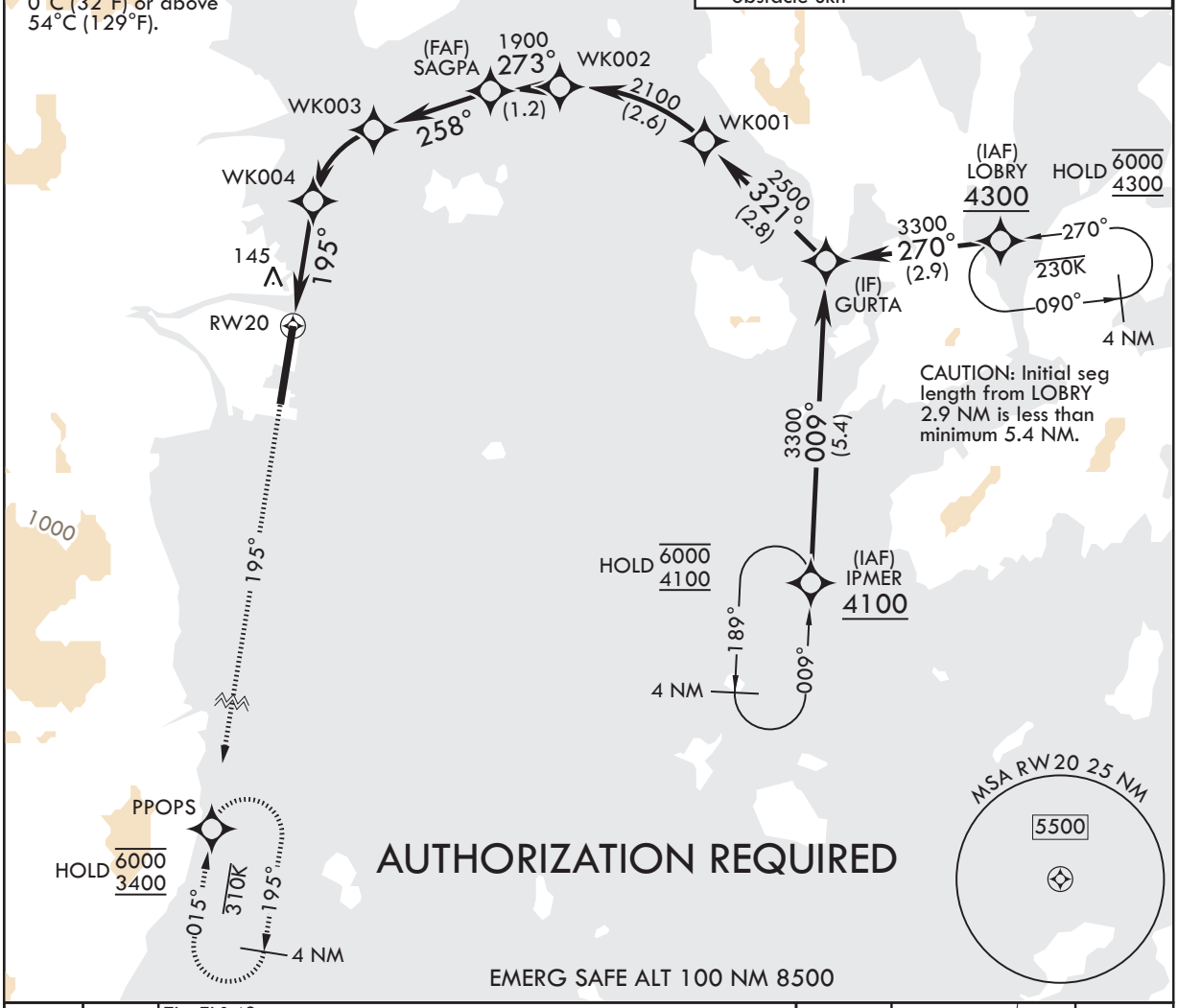

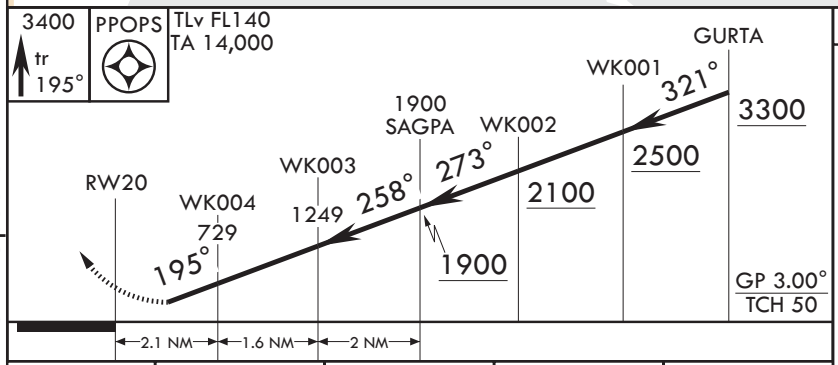

CATEGORY	A	B	C	D
RNP 0.30 DA	448-1¼	438	(500-1¼)	

ELEV 10

THRE 10

See Supp for declared dist.

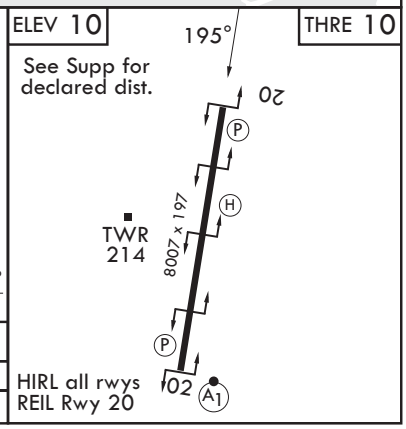

HIRL all rwys
REIL Rwy 20

CHANGE : Update.

NOTE: REPRINTING DOD FLIP

INSTRUMENT APPROACH CHART

RJOI / IWAKUNI

APCH CRS 195°	Rwy ldg 8007 THRE 10 Arpt Elev 10

RNAV(GPS) Y RWY20

RNP APCH - GPS

* Circling not authorized W of Rwy 02-20.

MISSED APPROACH: Climbing to 5000 direct PPOPS and hold, continue climb in hold to 5000.

ATIS★	APP CON★	TOWER★	GND CON★	ASR/PAR
128.4 283.0	131.4 236.2	123.8 340.2	121.3 360.2	

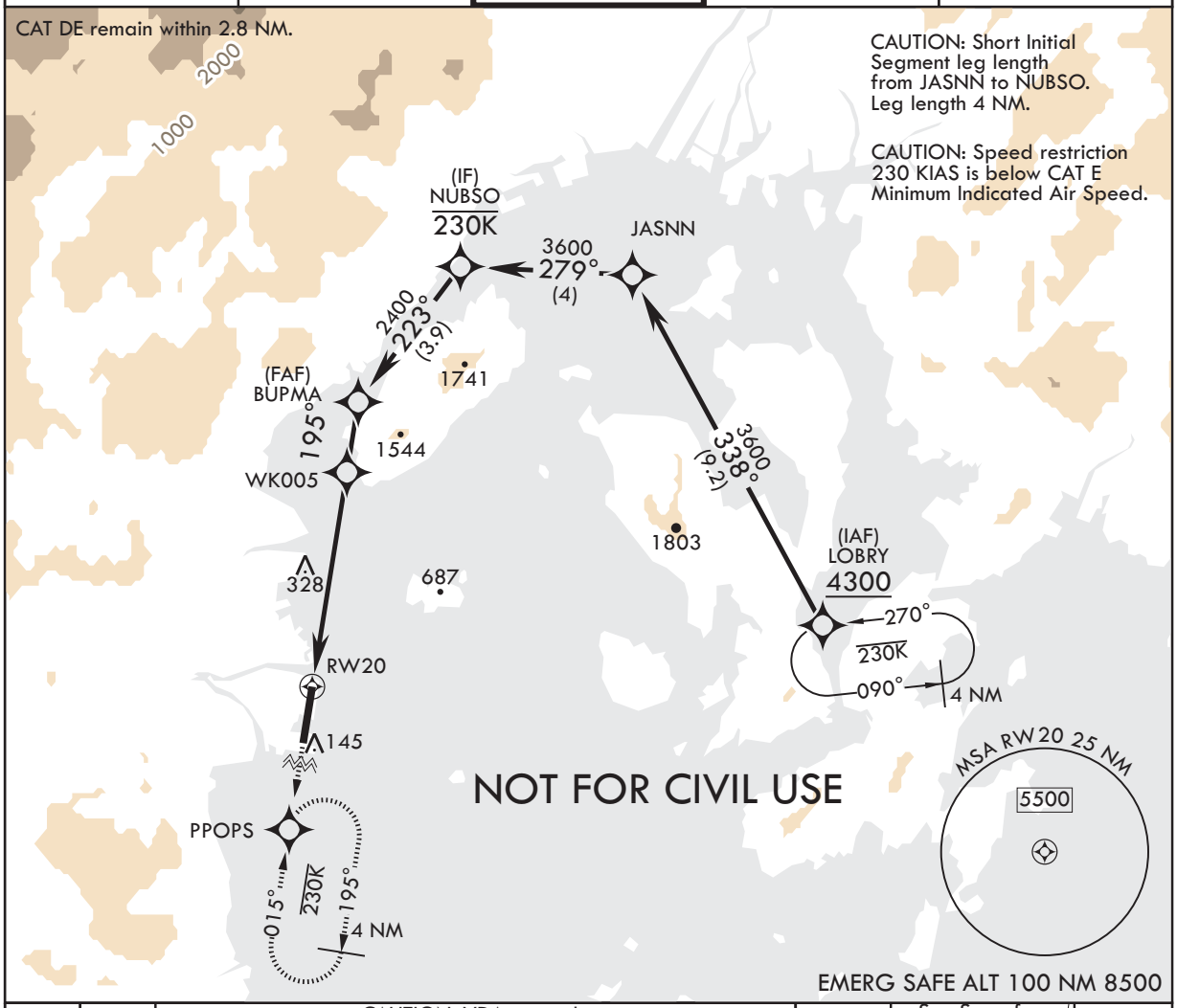

5000 | PPOPS | TA 14,000 TLv FL140

CAUTION: VDA exceeds maximum for CAT D and E aircraft (3.5°)

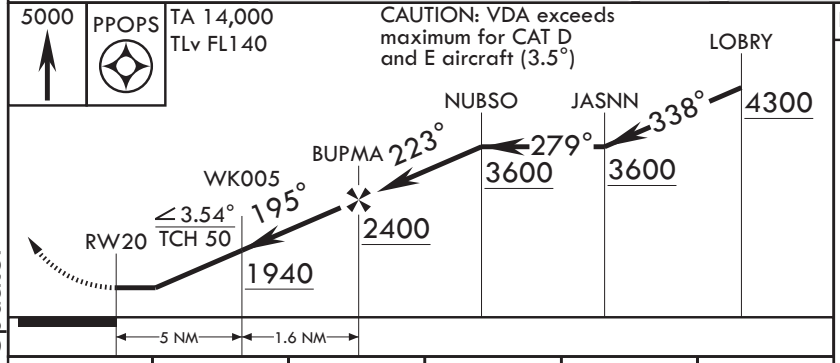

ELEV 10 | See Supp for declared dist. | THRE 10

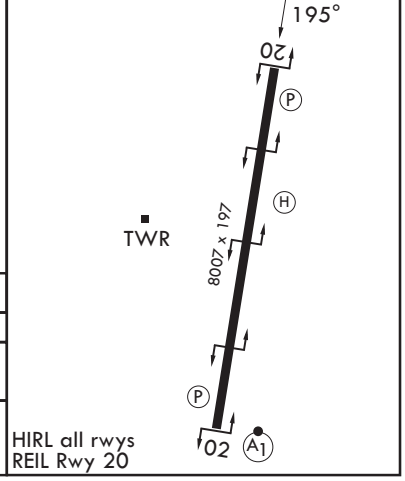

HIRL all rwys
REIL Rwy 20

CATEGORY	A	B	C	D	E
LNAV MDA	700-1600m 690 (700-1600m)		700-3200m 690 (700-3200m)		
CIRCLING*	700-1600m 690 (700-1600m)		700-3200m 690 (700-3200m)	1000-4800m 990 (1000-4800m)	

CHANGE : Update.

NOTE: REPRINTING DOD FLIP

RJOI / IWAKUNI

LDG CHART

SEALANE PATTERNS & VFR ARR PATTERNS

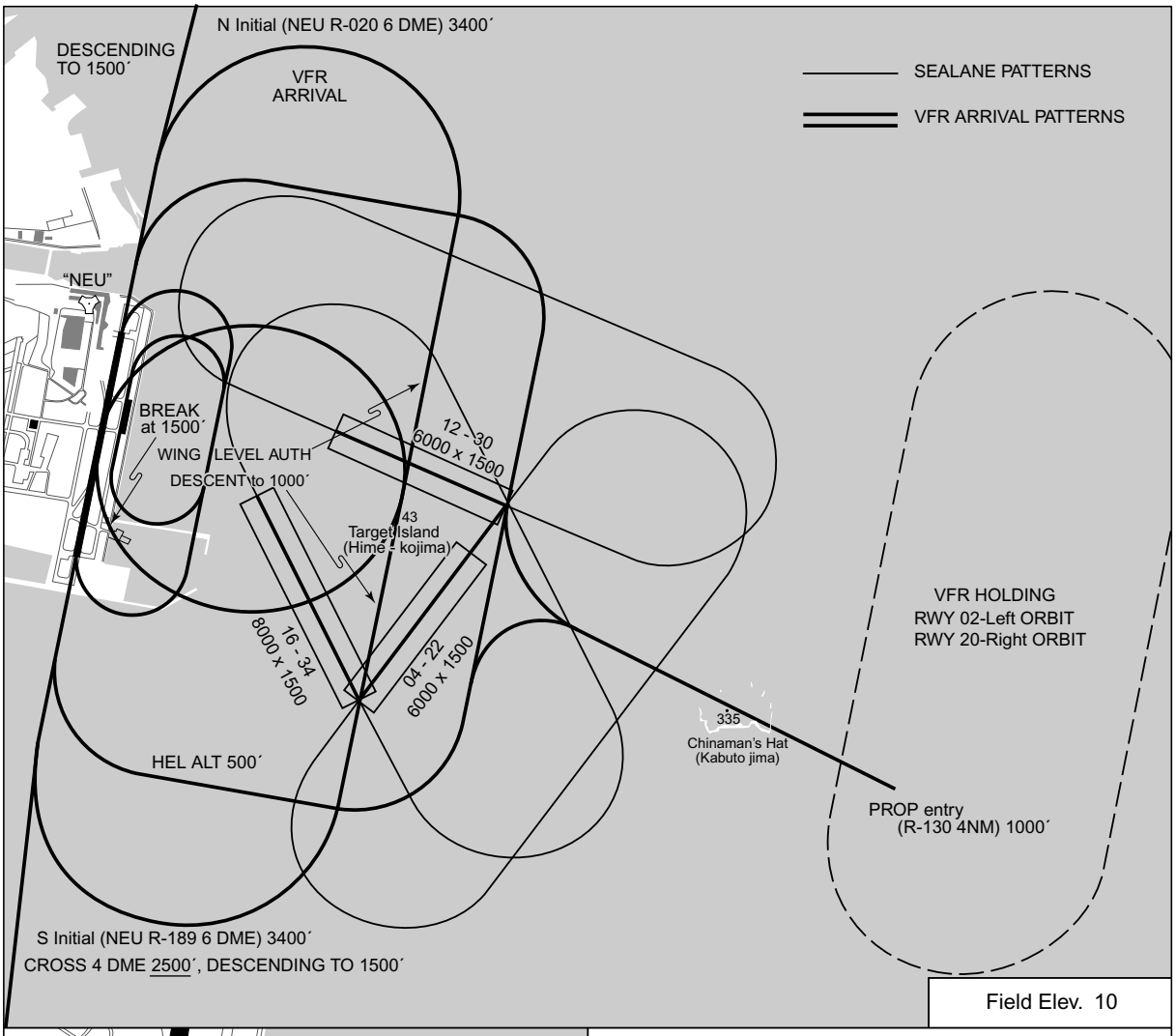

Field Elev. 10

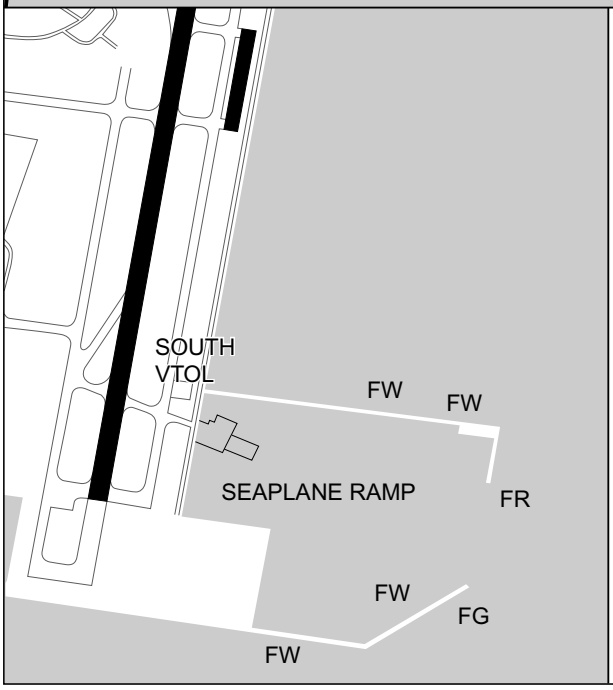

IWAKUNI SEALANE(TOWER) :
122.0 - 228.2 - 319.0

IWAKUNI APP : WEST
131.4 - 236.2
EAST 128.0 - 250.6

IWAKUNI TWR :
123.8 - 340.2

CHANGE : Update.

RJOI / IWAKUNI

Minimum Vectoring Altitude CHART

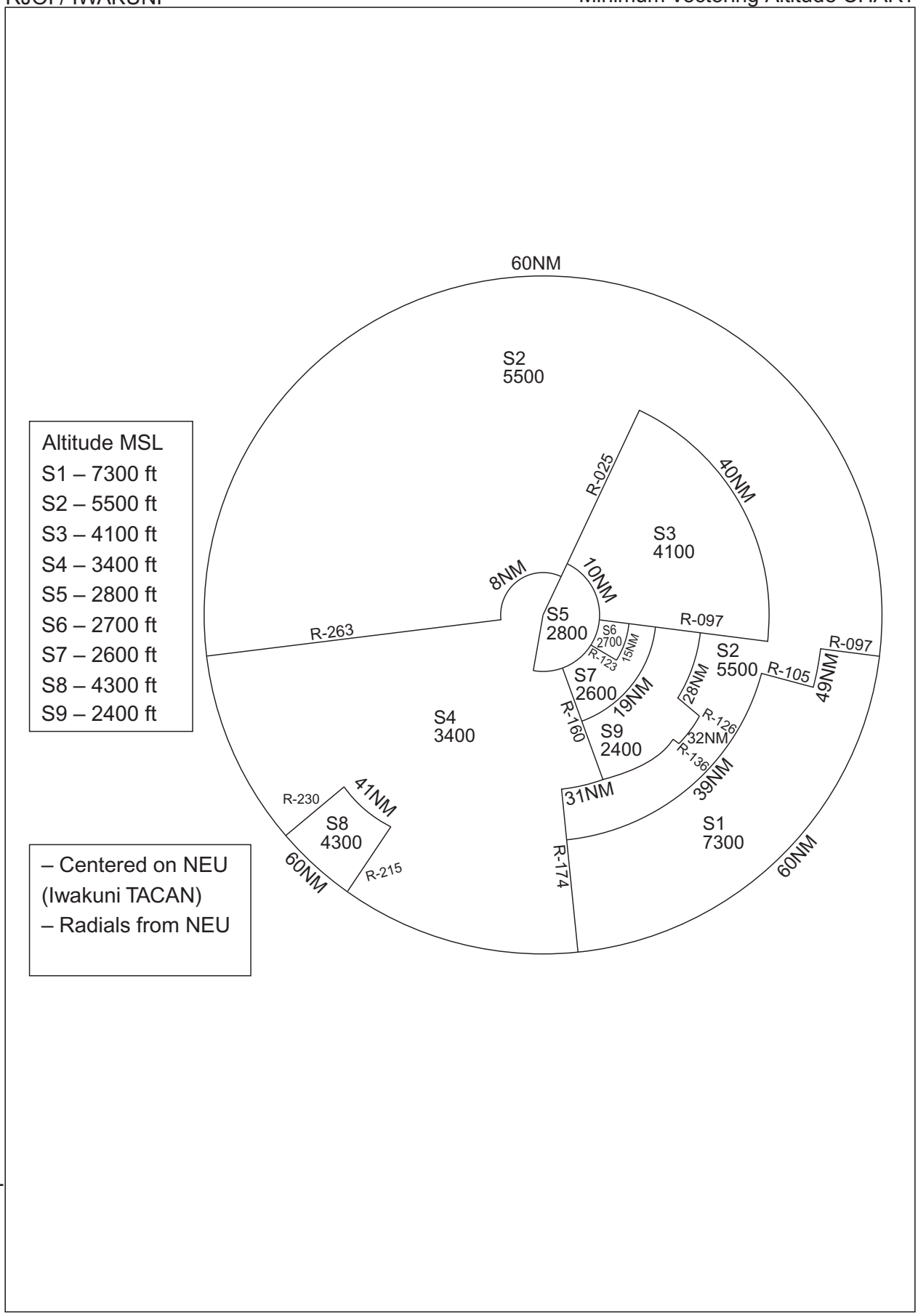

CHANGE : Update.